JN NEGERI SARAWAK
CADANGAN
PERSEMPADANAN SEMULA
BAHAGIAN PILIHAN RAYA
SARAWAK
2025

KANDUNGAN TAKLIMAT

1. PENGENALAN
2. CADANGAN
3. PETA KAWASAN PARLIMEN & DUN (ASAL DAN BAHARU) BAGI CADANGAN 17 DUN BAHARU
4. PETA KAWASAN PARLIMEN YANG BERUBAH SEMPADAN
5. RUMUSAN

1
PENGENALAN

SEJARAH URUSAN PERSEMPADANAN BAGI SARAWAK (1968 – 2015)

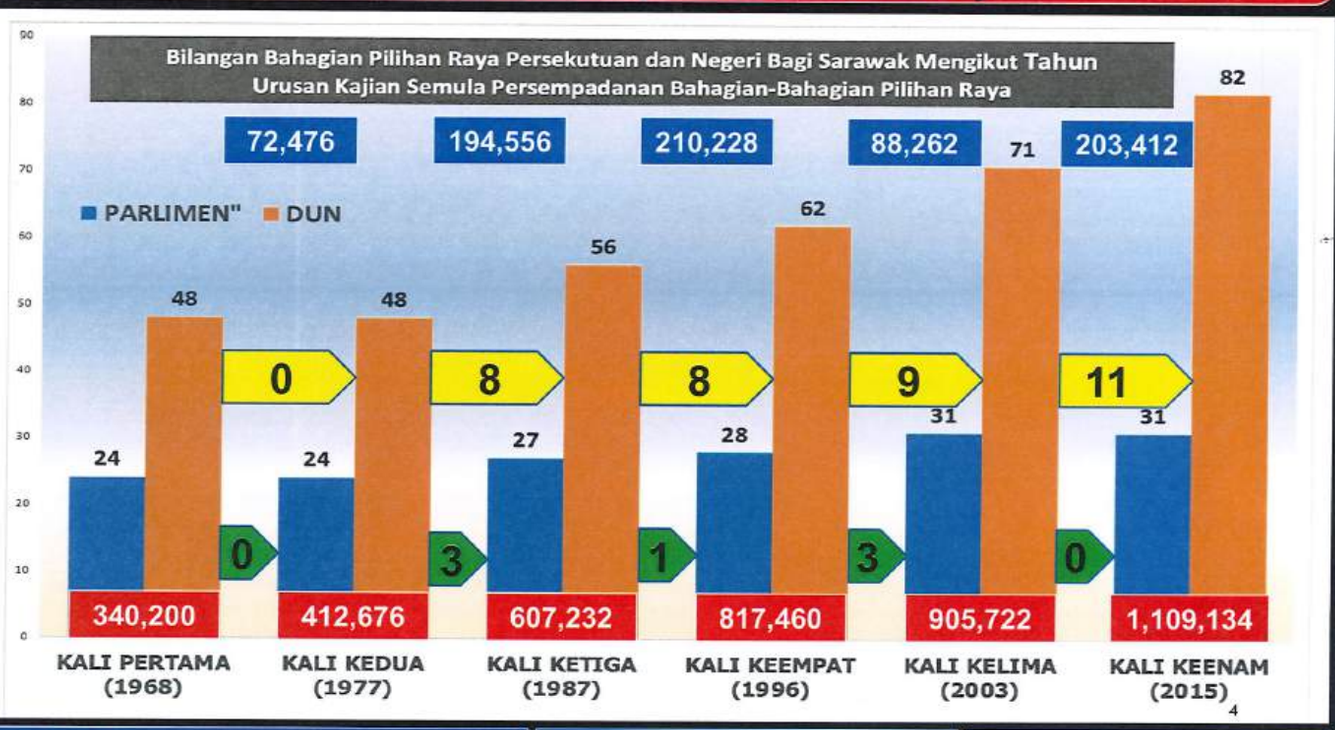

KALI KETUJUH (2025)	2,008,347	899,213

KSP SARAWAK 2014 / 2015

1 PINDAAN DI DUN SARAWAK
11 NOVEMBER 2014

2 KUATKUASA PINDAAN
05 DISEMBER 2014

3 PEMAKLUMAN & WARTA NOTIS 1
02 JANUARI 2015

4 PAMIRAN 1
05 JANUARI – 4 FEBRUARI 2015

5 SIASATAN TEMPATAN 1
23 FEBRUARI – 6 MAC 2015

1 ➡ 8
6 – 7 BULAN

6 PEMAKLUMAN & WARTA NOTIS 2
30 MAC 2015

7 PAMIRAN 2
30 MAC – 29 APRIL 2015

8 SIASATAN TEMPATAN 2
11 – 13 MEI 2015

9 KES MAHKAMAH
15 MEI – 15 OKTOBER 2015

10 BENTANG DI PARLIMEN
02 DISEMBER 2015

11 WARTA PERINTAH PERSEMPADANAN
18 DISEMBER 2015

12 KUATKUASA PERINTAH PERSEMPADANAN
19 DISEMBER 2015

13 WARTA PELAN WARTA BAHARU SARAWAK
30 DISEMBER 2015

14 PRN 11 SARAWAK 2016

BUBAR	: 11 / 4 / 2016
PC	: 25 / 4 / 2016
UA	: 03 / 5 / 2016
UB	: 07 / 5 / 2016

≠ 3 - 4 BULAN

PECAHAN KAUM PEMILIH BERDAFTAR (DISEMBER 2024 : WARTA 22 JANUARI 2025)

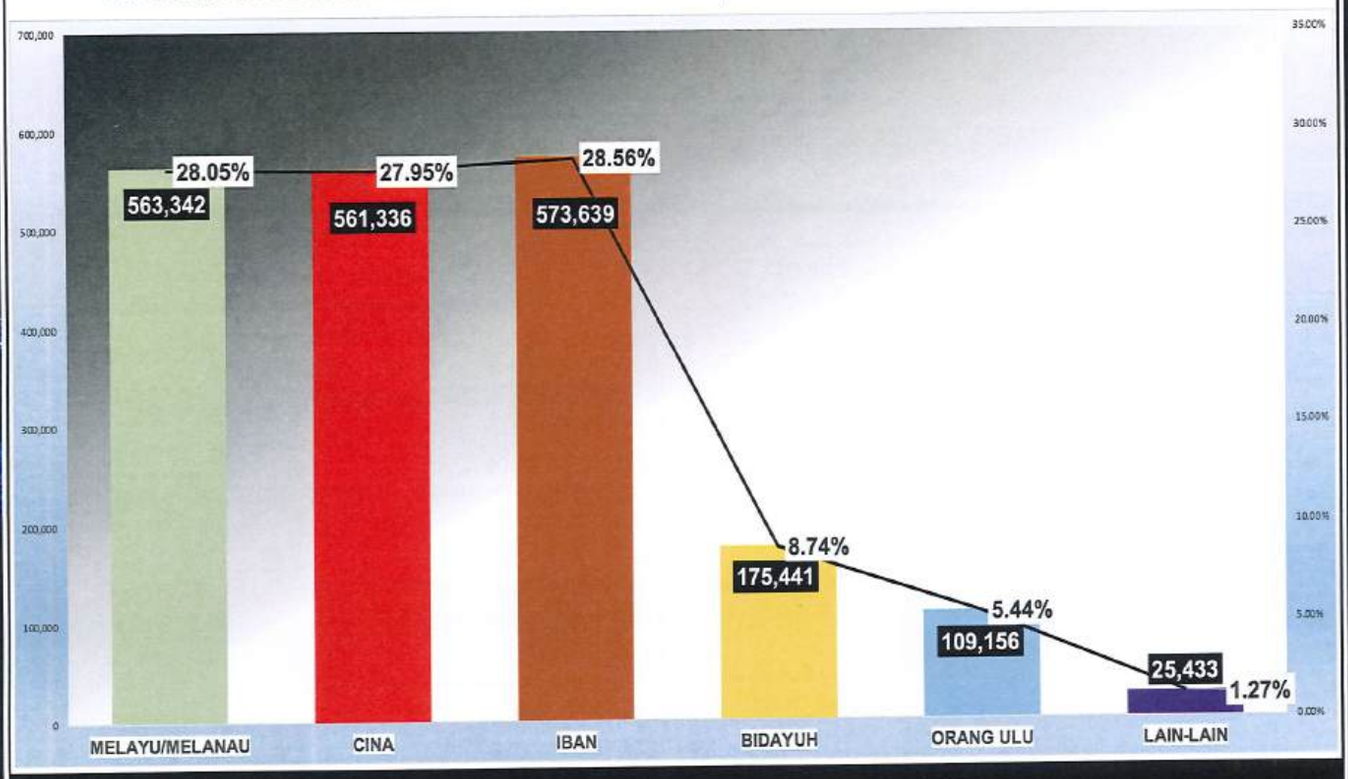

JUMLAH PEMILIH : 2,008,347

PECAHAN KAUM
MELAYU / MELANAU vs IBAN / BIDAYUH /ORANG ULU

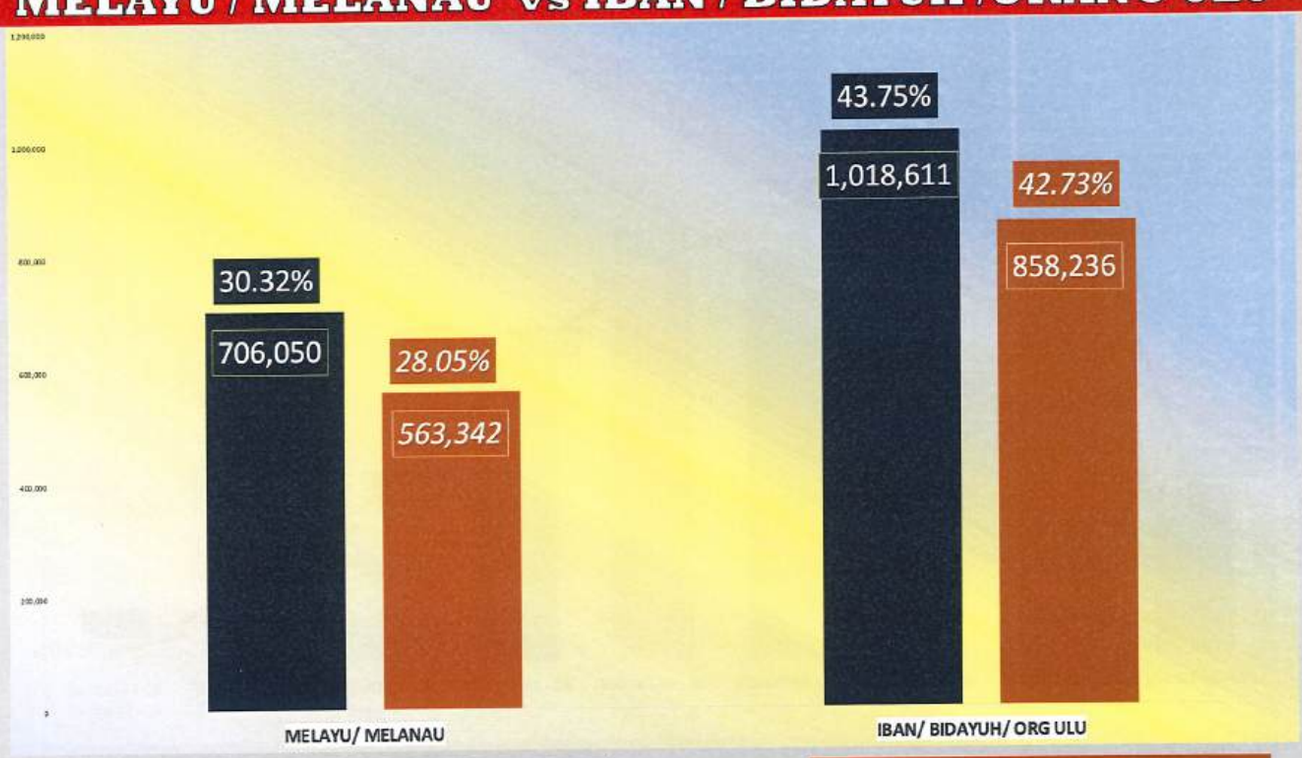

Statistik Banci Penduduk Sarawak Tahun 2020

Daftar Pemilih Disember 2024 (Warta 22 Januari 2025)

PECAHAN UMUR PEMILIH SARAWAK (DISEMBER 2024 : WARTA 22 JANUARI 2025)

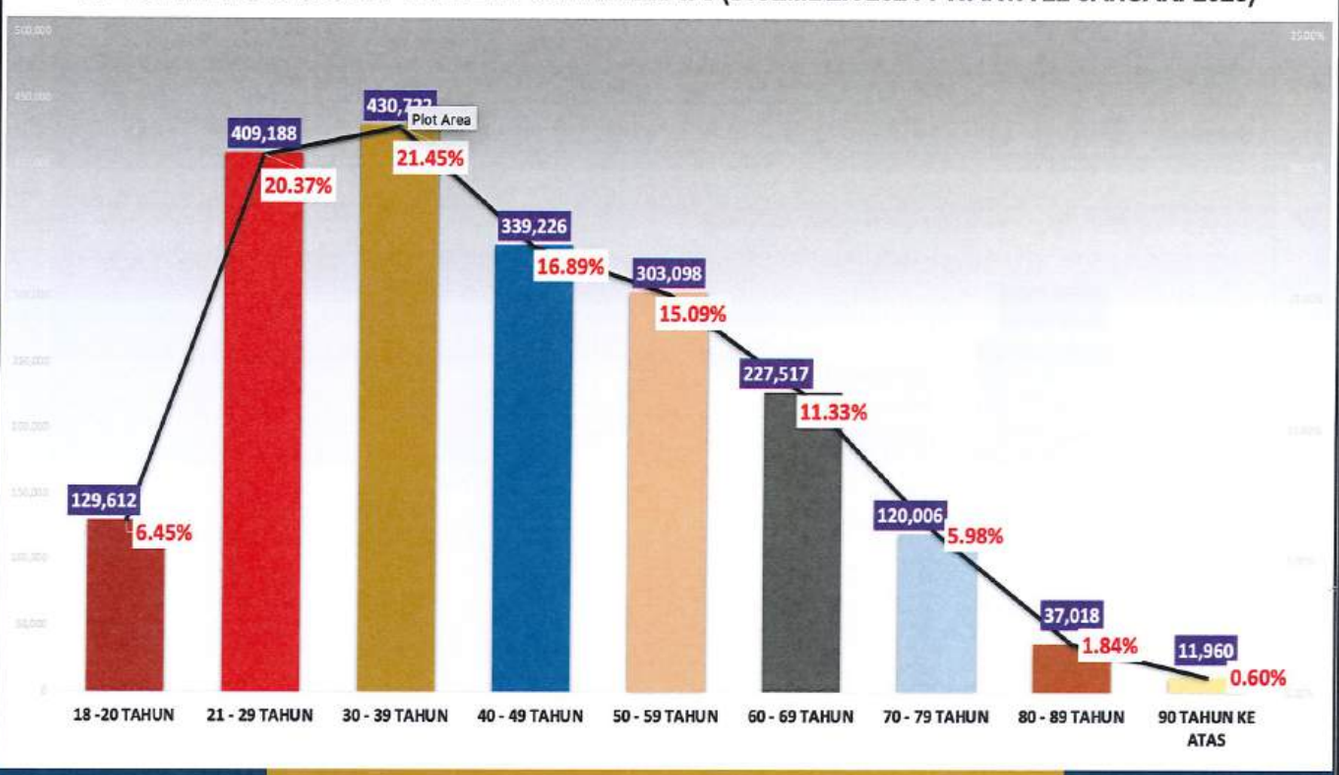

JUMLAH PEMILIH : 2,008,347

JADUAL PERSIDANGAN DEWAN

DUN SARAWAK (2025)

19 – 28 MEI

DEWAN RAKYAT (2026)

FEBRUARI – MAC

JUN – JULAI

OKTOBER – DISEMBER


2
CADANGAN

SARAWAK : CADANGAN PERSEMPADANAN SEMULA BAHAGIAN PILIHAN RAYA 2025

ASAL	CADANGAN	SELEPAS CADANGAN
DUN	DUN	DUN
82	17	99
PARLIMEN	PARLIMEN	PARLIMEN
31	15	46

BAHAGIAN PILIHAN RAYA PARLIMEN YANG TIDAK TERLIBAT & TERLIBAT

TIDAK TERLIBAT DENGAN PENAMBAHAN DUN	TERLIBAT DENGAN PINDAAN SEMPADAN	TERLIBAT DENGAN PENAMBAHAN 17 DUN BAHARU	
P.195 B. KUCHING	P.199 SERIAN	P.192 MAS GADING	P.2I2 SIBU
P.197 K.SAMARAHAN	P.201 BTG LUPAR	P.193 SANTUBONG	P.213 MUKAH
P.200 BTG SADONG	P.202 SRI AMAN	P.194 PETRA JAYA	P.214 SELANGAU
P.205 SARATOK	P.203 LBK ANTU	P.196 STAMPIN	P.215 KAPIT
P.209 JULAU	P.204 BETONG	P.198 P. BORNEO	P.2I8 SIBUTI
P.210 KANOWIT	P.207 IGAN	P.206 TG. MANIS	P.219 MIRI
P.221 LIMBANG	P.208 SARIKEI	P.211 LANANG	P.220 BARAM
P.222 LAWAS	P.216 H.RAJANG		
	P.217 BINTULU		
8	9	14	

SARAWAK : BAHAGIAN PILIHAN RAYA NEGERI BAHARU

17

1	JAGOI	7	SUSUR JAMBU	13	MELEKUN
2	SEJINJANG	8	TANAHMAS	14	TUKAU
3	SERAPI	9	SUNGAI MERAH	15	PERMAISURI
4	SEMARAK	10	BKT KEMUYANG	16	TUDAN
5	SELEDAH	11	OYA	17	USUN APAU
6	SUNGAI SERIN	12	BUKIT ARIP		

SARAWAK : BAHAGIAN PILIHAN RAYA NEGERI BARU 17

1	P.192 MAS GADING	JAGOI	1
2	P.193 SANTUBONG	SEJINJANG	2
3	P.194 PETRA JAYA	SERAPI	3
		SEMARAK	4
4	P.196 STAMPIN	SELEDAH	5
5	P.198 P. BORNEO	SG. SERIN	6
6	P.206 TG MANIS	SUSUR JAMBU	7
7	P.211 LANANG	TANAHMAS	8
8	P.212 SIBU	SG. MERAH	9
		BKT. KEMUYANG	10
9	P.213 MUKAH	OYA	11
10	P.214 SELANGAU	BUKIT ARIP	12
11	P.215 KAPIT	MELEKUN	13
12	P.218 SIBUTI	TUKAU	14
13	P.219 MIRI	PERMAISURI	15
		TUDAN	16
14	P.220 BARAM	USUN APAU	17

SARAWAK : PERTUKARAN NAMA BAHAGIAN PILIHAN RAYA NEGERI

	NAMA ASAL DUN	NAMA BARU DUN
1	OPAR	SERAYAN
2	TASIK BIRU	SINGAI
3	TARAT	BUNG SADUNG
4	SEMOP	MUARA LASSA
5	JEMORENG	MATU
6	BAWANG ASSAN	RASSAU
7	LAMBIR	PANTAI TUSAN
8	JEPAK	JEPAK JAYA
9	SENADIN	RIAM
10	BA'KELALAN	GUNONG MURUD

3
PETA KAWASAN
PARLIMEN & NEGERI
ASAL / BAHARU
(17 DUN BAHARU)

LUAS KAWASAN (KM²)

SARAWAK	124,449

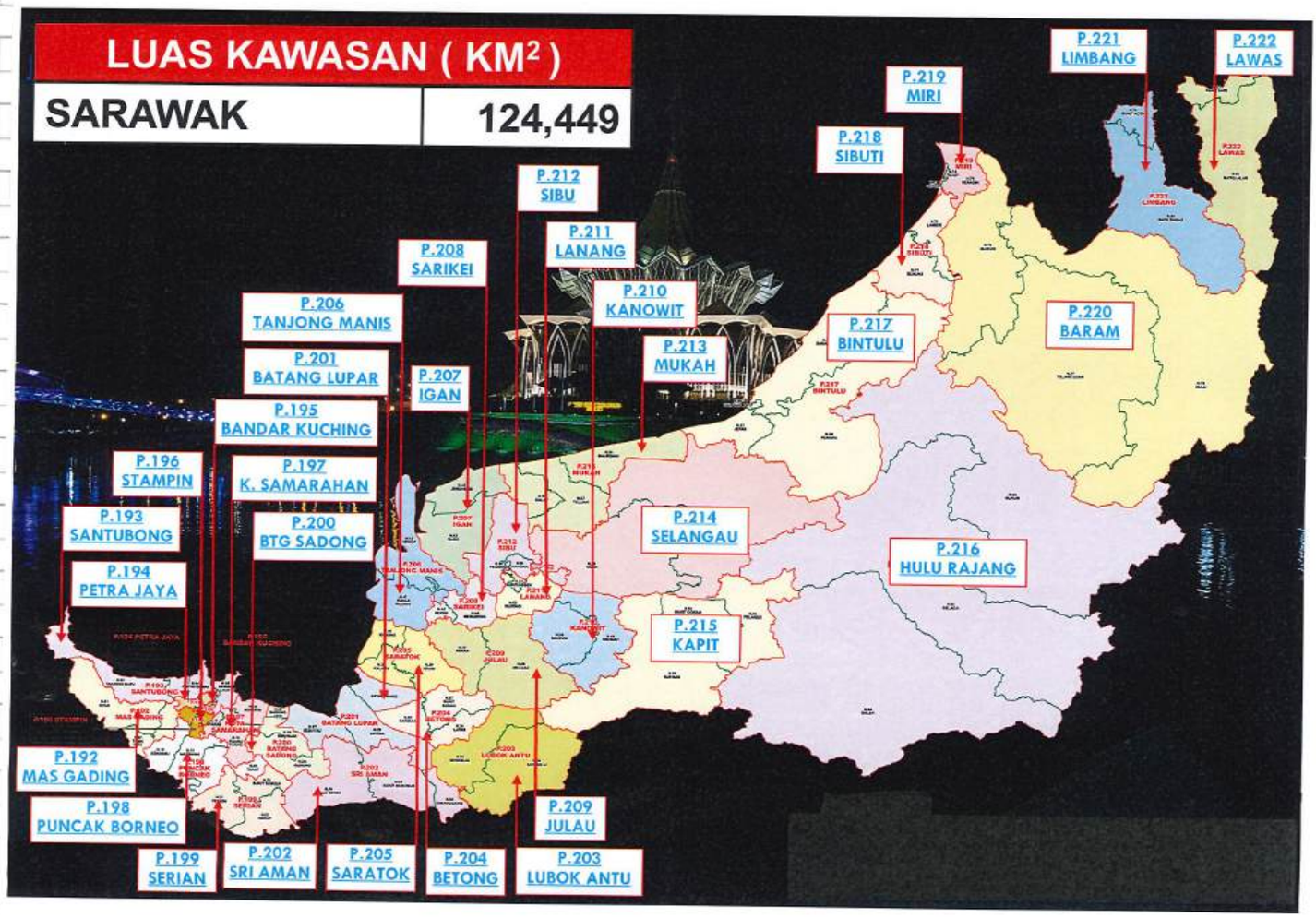

P.192 MAS GADING

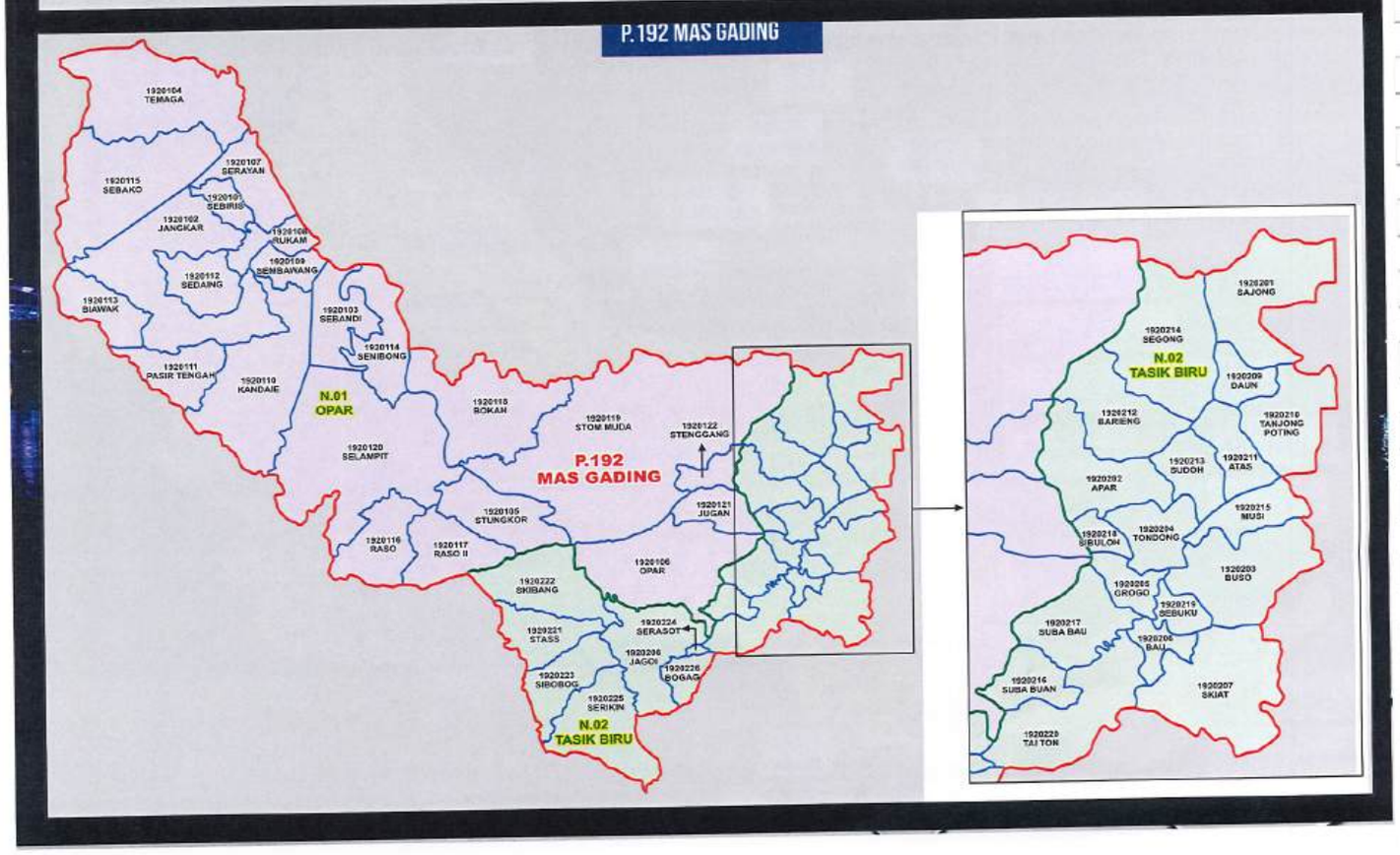

PARLIMEN / DUN ASAL
(JUMLAH PEMILIH / PECAHAN KAUM / PARTI / LUAS KAWASAN)

KAUM / N/P	MELAYU		CINA		IBAN		BIDAYUH		ORANG ULU	
	JUM	%	JUM	%	JUM	%	JUM	%	JUM	%
OPAR	774	4.0	1,387	7.2	2,047	10.6	14,741	76.4	164	0.8
TASIK BIRU	1,973	6.7	6,739	22.9	1,204	4.1	19,021	64.5	227	0.8
MAS GADING	2,747	5.6	8,126	16.7	3,251	6.7	33,762	69.2	391	0.8

DUN / PARLIMEN	PEMILIH	PARTI	LUAS KAWASAN (KM^2)
OPAR	19,302	SUPP	1,010
TASIK BIRU	29,475	PDP	471
MAS GADING	48,777	PDP	1,481

P.192 MAS GADING

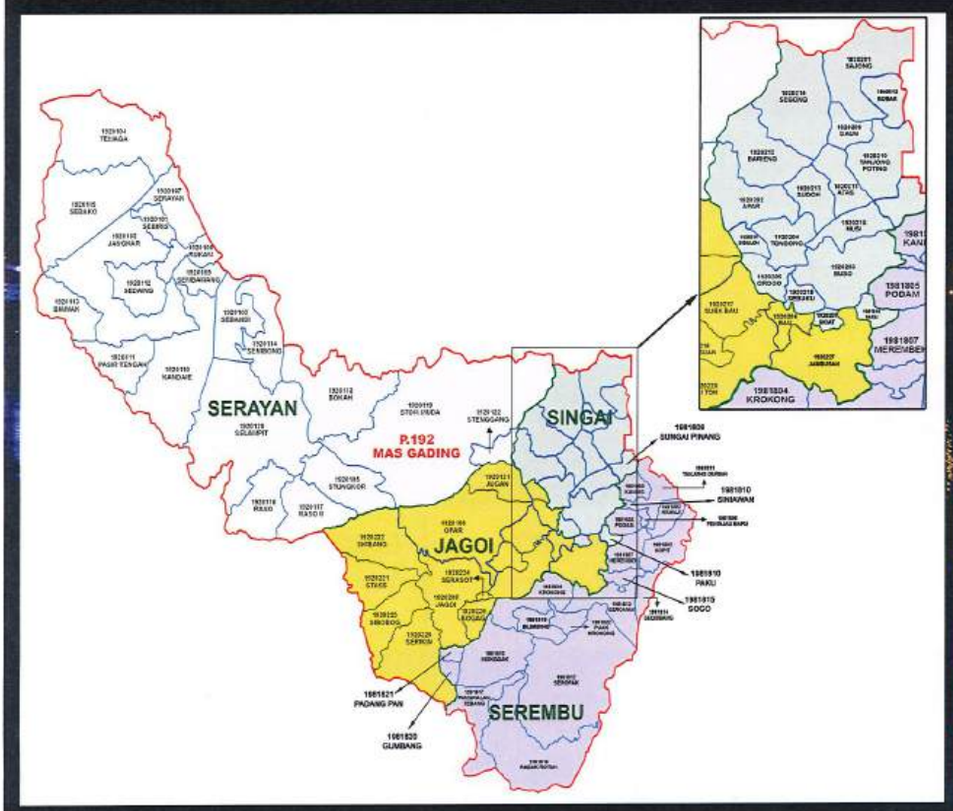

DUN/PARLIMEN	PEMILIH
SERAYAN	16,570
JAGOI	16,947
SINGAI	17,627
SEREMBU	14,815
MAS GADING	65,959

DUN/PARLIMEN	PARTI
SERAYAN	SUPP
JAGOI	PDP
SINGAI	PDP
SEREMBU	PBB
MAS GADING	PDP

KAUM (SELEPAS PERSEMPADANAN)

KAUM / N/P	MELAYU		CINA		IBAN		BIDAYUH		ORANG ULU	
	JUM	%	JUM	%	JUM	%	JUM	%	JUM	%
SERAYAN	742	4.5	1,343	8.1	1,969	11.9	12,210	73.7	143	0.9
JAGOI	1,186	7.0	2,142	24.4	577	3.4	10,752	63.4	138	0.8
SINGAI	834	4..7	3,297	18.7	793	4.5	12,379	70.2	117	0.7
SEREMBU	859	5.8	2,690	18.2	499	3.4	10,538	71.1	120	0.8
MAS GADING	3,621	5.5	11,472	17.4	3,838	5.8	45,879	69.6	518	0.8

P.193 SANTUBONG

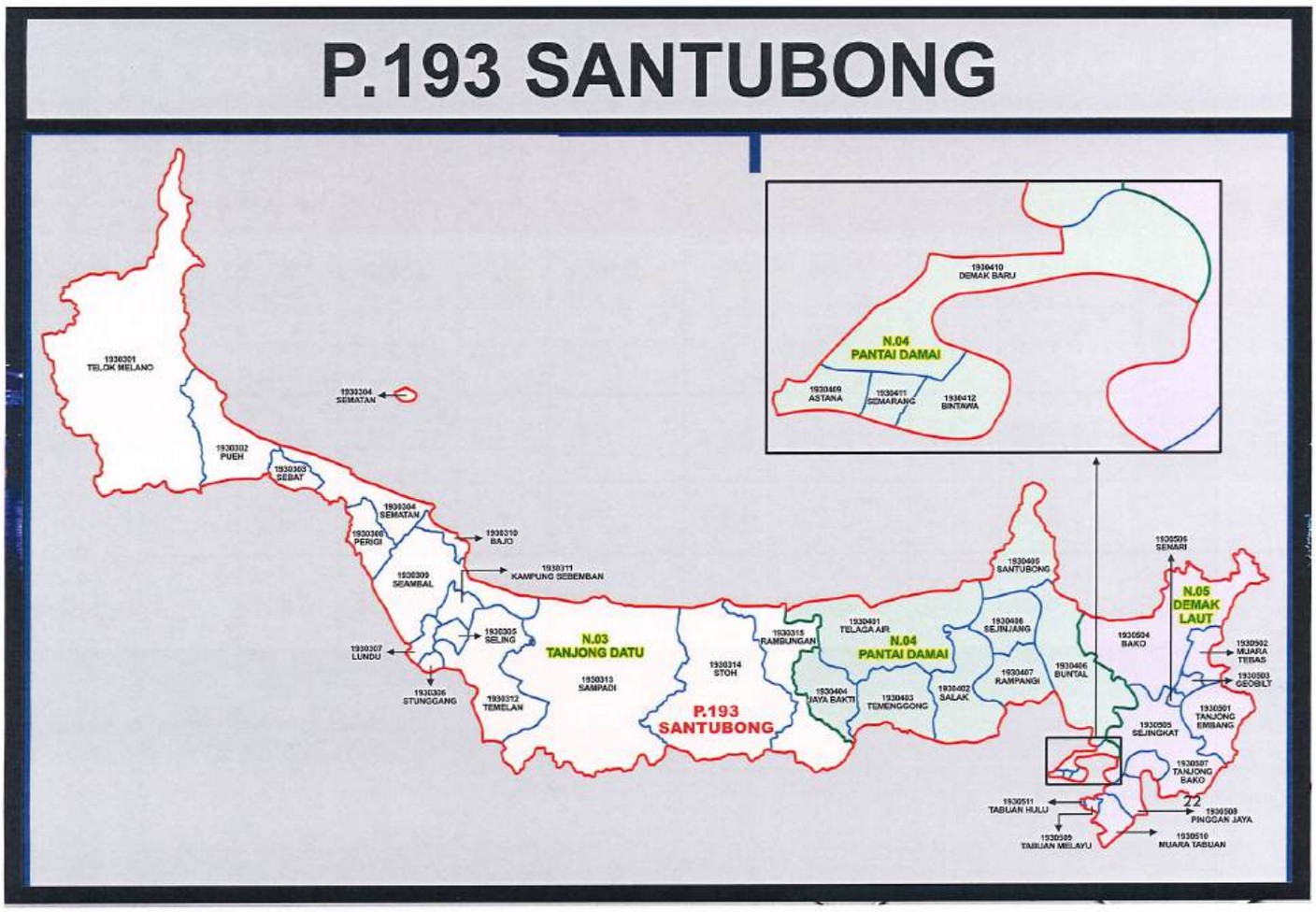

PARLIMEN / DUN ASAL
(JUMLAH PEMILIH / PECAHAN KAUM / PARTI / LUAS KAWASAN)

KAUM / N/P	MELAYU		CINA		IBAN		BIDAYUH		ORANG ULU	
	JUM	%	JUM	%	JUM	%	JUM	%	JUM	%
TG. DATU	8,794	53.2	2,891	17.5	2,892	17.5	1,670	10.1	128	0.8
P. DAMAI	35,168	88.0	1,103	2.8	2,204	5.5	943	2.4	219	0.5
D. LAUT	22,387	83.7	2,442	9.1	1,000	3.7	601	2.2	142	0.5
SANTUBONG	66,349	79.7	6,436	7.7	6,096	7.3	3,214	3.9	489	0.6

DUN / PARLIMEN	PEMILIH	PARTI	LUAS KAWASAN (KM^2)
TANJONG DATU	16,538	PBB	905
PANTAI DAMAI	39,943	PBB	373
DEMAK LAUT	26,741	PBB	223
SANTUBONG	83,222	PBB	1,501

P.193 SANTUBONG

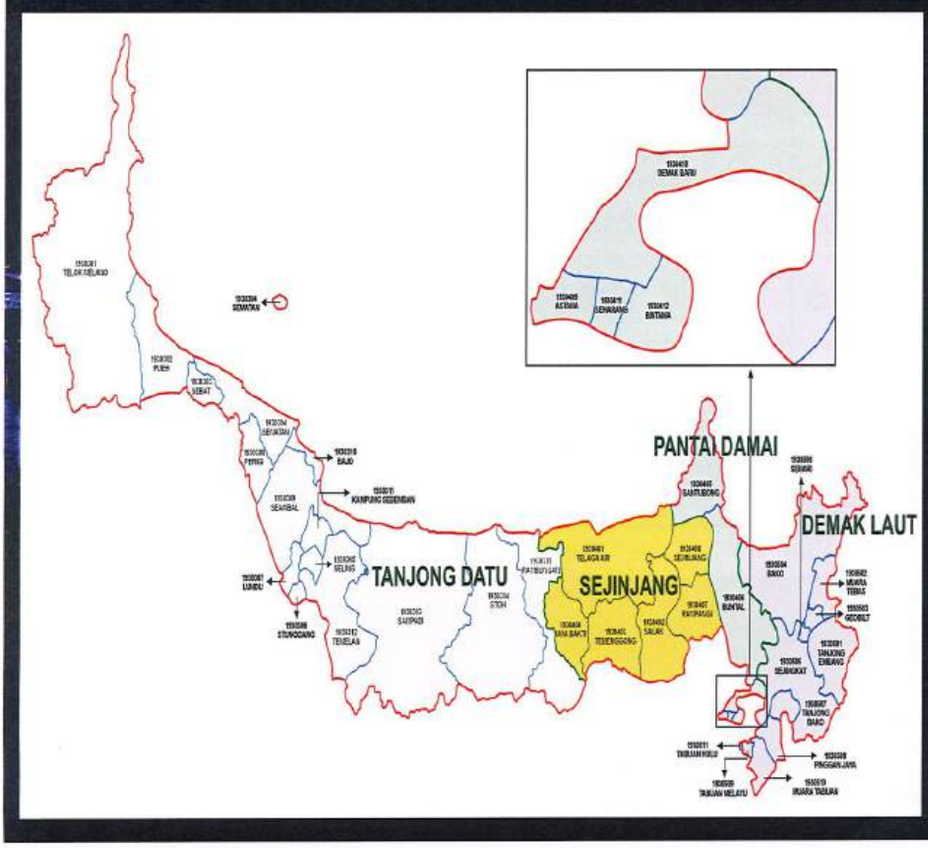

DUN / PARLIMEN	PEMILIH
TANJONG DATU	16,538
SEJINJANG	18,764
PANTAI DAMAI	21,179
DEMAK LAUT	26,741
SANTUBONG	83,222

DUN / PARLIMEN	PARTI
TANJONG DATU	PBB
SEJINJANG	PBB
PANTAI DAMAI	PBB
DEMAK LAUT	PBB
SANTUBONG	PBB

KAUM (SELEPAS PERSEMPADANAN)

KAUM / N/P	MELAYU		CINA		IBAN		BIDAYUH		ORANG ULU	
	JUM	%	JUM	%	JUM	%	JUM	%	JUM	%
TANJONG DATU	8,794	53.2	2,891	17.5	2,892	17.5	1,670	10.1	163	1.0
SEJINJANG	15,427	82.2	625	3.3	1,811	9.7	630	3.4	102	0.5
PANTAI DAMAI	19,741	93.2	478	2.3	393	1.9	313	1.5	117	0.6
DEMAK LAUT	22,387	83.7	2,442	9.1	1,000	3.7	601	2.2	142	0.5
SANTUBONG	66,349	79.7	6,436	7.7	6,096	7.3	3,214	3.9	489	0.6

P.194 PETRA JAYA

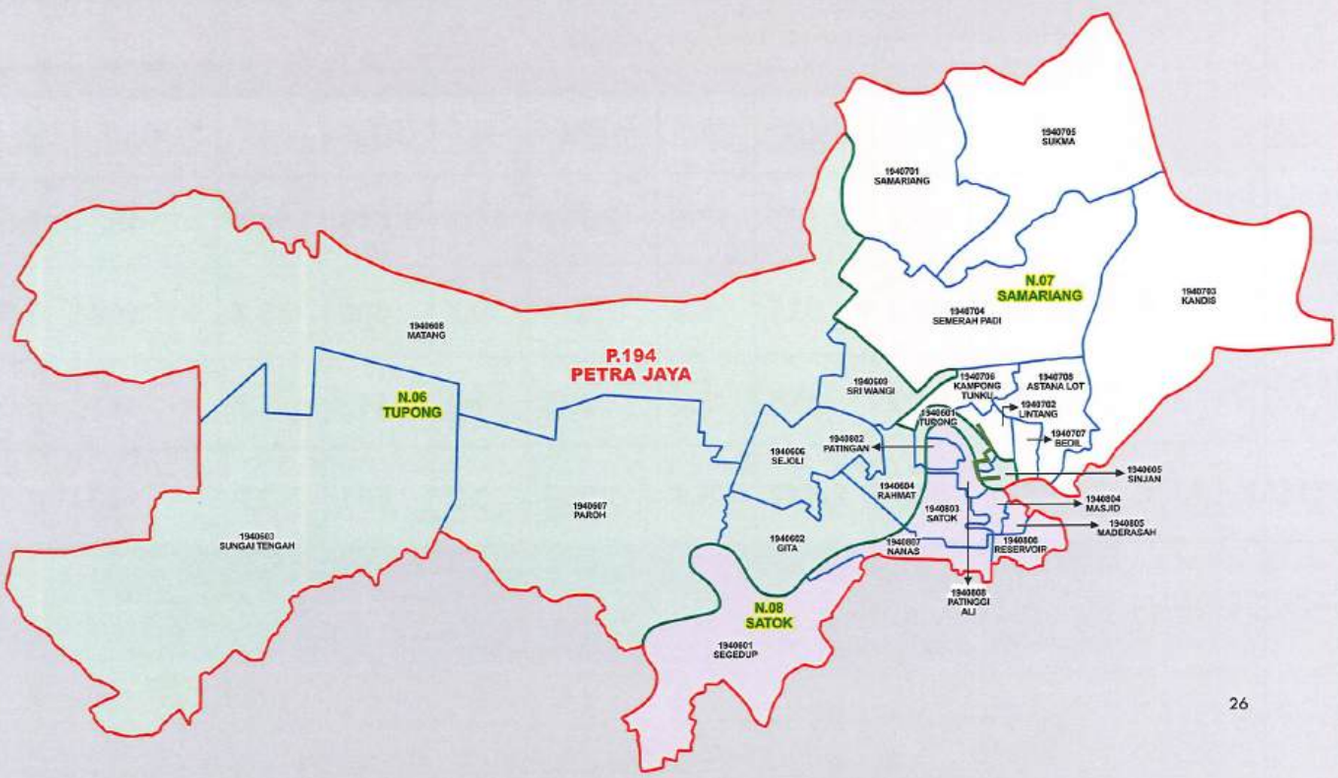

PARLIMEN / DUN ASAL
(JUMLAH PEMILIH / PECAHAN KAUM / PARTI / LUAS KAWASAN)

KAUM / N/P	MELAYU		CINA		IBAN		BIDAYUH		ORANG ULU	
	JUM	%	JUM	%	JUM	%	JUM	%	JUM	%
TUPONG	33,300	61.2	10,208	18.7	5,589	10.3	4,141	7.6	414	0.8
SAMARIANG	35,251	89.3	587	1.5	2,254	5.7	783	2.0	272	0.7
SATOK	13,837	68.3	4,180	20.6	1,045	5.2	609	3.0	187	0.9
PETRA JAYA	82,388	72.2	14,975	13.1	8,888	7.8	5,533	4.8	873	0.8

DUN / PARLIMEN	PEMILIH	PARTI	LUAS KAWASAN (KM^2)
TUPONG	54,447	PBB	99
SAMARIANG	39,480	PBB	17
SATOK	20,246	PBB	10
PETRA JAYA	114,173	PBB	126

P.194 PETRA JAYA

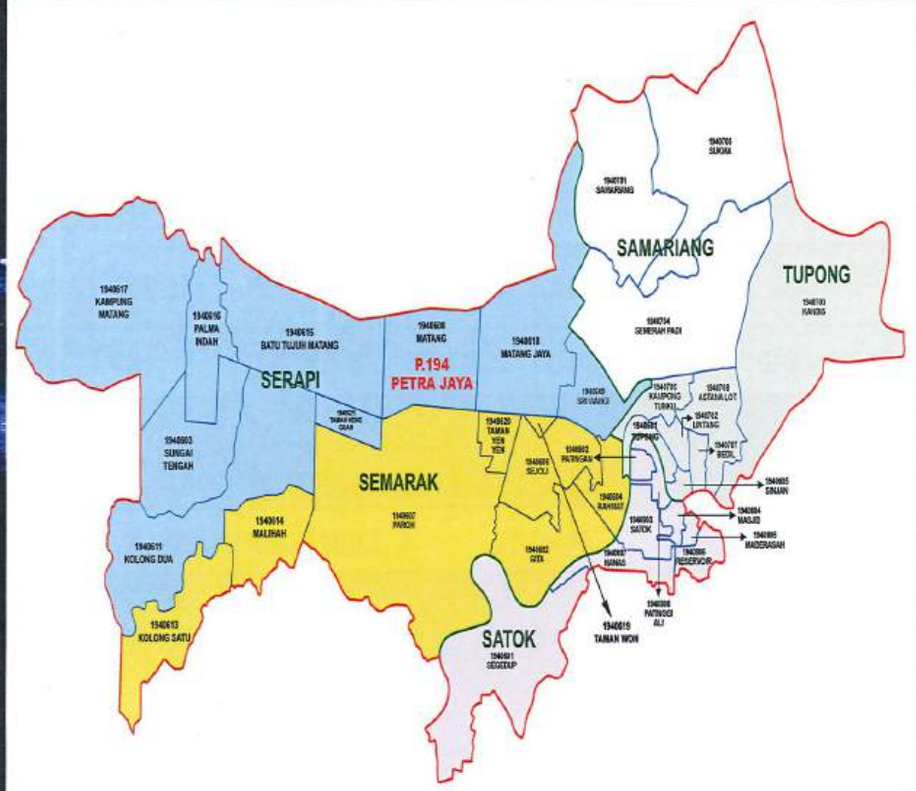

DUN/PARLIMEN	PEMILIH
SERAPI	21,419
SEMARAK	26,941
SAMARIANG	23,034
TUPONG	21,732
SATOK	20,246
PETRA JAYA	113,372

DUN/PARLIMEN	PARTI
SERAPI	PBB
SEMARAK	PBB
SAMARIANG	PBB
TUPONG	PBB
SATOK	PBB
PETRA JAYA	PBB

KAUM (SELEPAS PERSEMPADANAN)

KAUM / N/P	MELAYU		CINA		IBAN		BIDAYUH		ORANG ULU	
	JUM	%	JUM	%	JUM	%	JUM	%	JUM	%
SERAPI	11,764	54.9	5,172	24.1	2,356	11.0	1,640	7.7	167	0.8
SEMARAK	16,493	61.2	4,922	18.3	3,119	11.6	1,754	6.5	220	0.8
SAMARIANG	20,264	93.2	225	1.0	578	2.7	377	1.7	127	0.6
TUPONG	20,023	86.9	413	1.8	1,752	7.6	475	2.1	171	0.7
SATOK	13,837	68.3	4,180	20.6	1,045	5.2	609	3.0	187	0.9
PETRA JAYA	82,381	72.7	14,912	13.2	8,850	7.8	4,855	4.3	872	0.8

P.196 STAMPIN

PARLIMEN / DUN ASAL
(JUMLAH PEMILIH / PECAHAN KAUM / PARTI / LUAS KAWASAN)

KAUM / N/P	MELAYU		CINA		IBAN		BIDAYUH		ORANG ULU	
	JUM	%	JUM	%	JUM	%	JUM	%	JUM	%
KOTA SENTOSA	4,661	9.9	34,509	72.9	4,719	10.0	2,505	5.3	342	0.7
BATU KITANG	8,173	21.1	20,449	52.7	3,324	8.6	6,139	15.8	300	0.8
BATU KAWAH	6,392	16.1	22,155	55.7	5,816	14.6	4,358	10.9	340	0.9
STAMPIN	19,226	15.3	77,113	61.2	13,859	11.0	13,002	10.3	982	0.8

DUN / PARLIMEN	PEMILIH	PARTI	LUAS KAWASAN (KM^2)
KOTA SENTOSA	47,318	SUPP	35
BATU KITANG	38,809	SUPP	80
BATU KAWAH	39,802	SUPP	79
STAMPIN	125,929	SUPP	194

P.196 STAMPIN

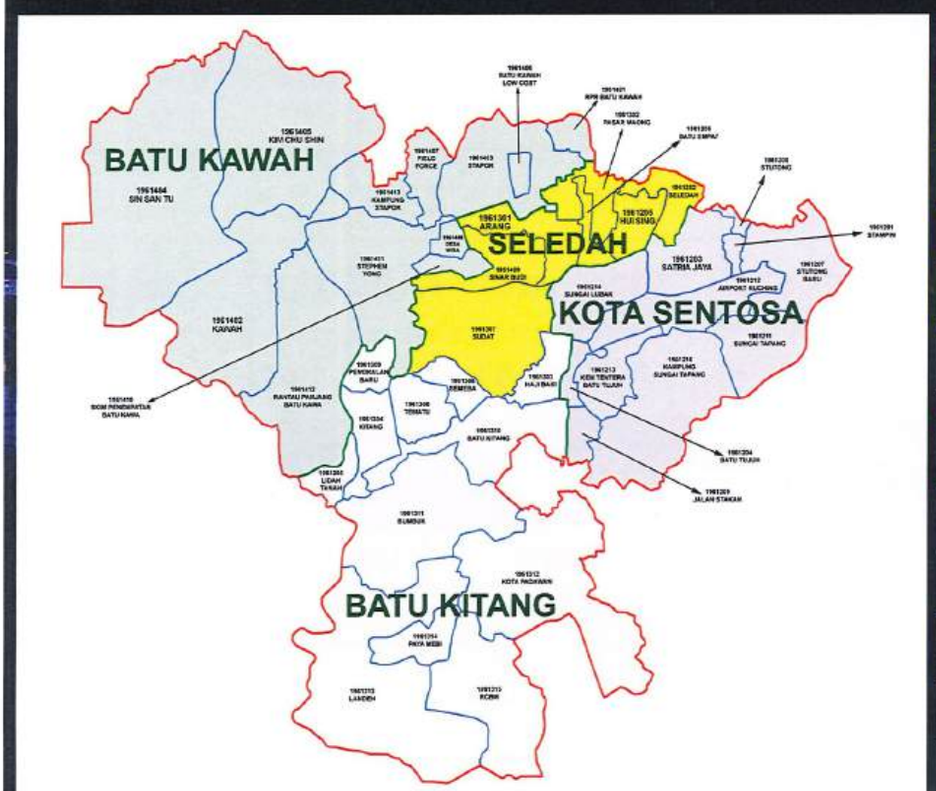

DUN/PARLIMEN	PEMILIH
BATU KAWAH	38,693
BATU KITANG	25,255
SELEDAH	28,949
KOTA SENTOSA	33,004
STAMPIN	125,901

DUN/PARLIMEN	PARTI
BATU KAWAH	SUPP
BATU KITANG	SUPP
SELEDAH	SUPP
KOTA SENTOSA	SUPP
STAMPIN	SUPP

KAUM (SELEPAS PERSEMPADANAN)

KAUM / N/P	MELAYU		CINA		IBAN		BIDAYUH		ORANG ULU	
	JUM	%	JUM	%	JUM	%	JUM	%	JUM	%
BATU KAWAH	5,465	14.1	22,100	57.1	5,748	14.9	4,311	11.1	337	0.9
BATU KITANG	7,643	30.3	9,286	36.8	2,742	10.9	5,089	20.2	230	0.9
SELEDAH	1,749	6.0	24,399	84.3	956	3.3	1,414	4.9	134	0.5
KOTA SENTOSA	4,362	13.2	21,319	64.6	4,407	13.4	2,181	6.6	284	0.9
STAMPIN	19,219	15.3	77,104	61.6	13,853	11.0	12,995	10.3	985	0.8

P.198 PUNCAK BORNEO

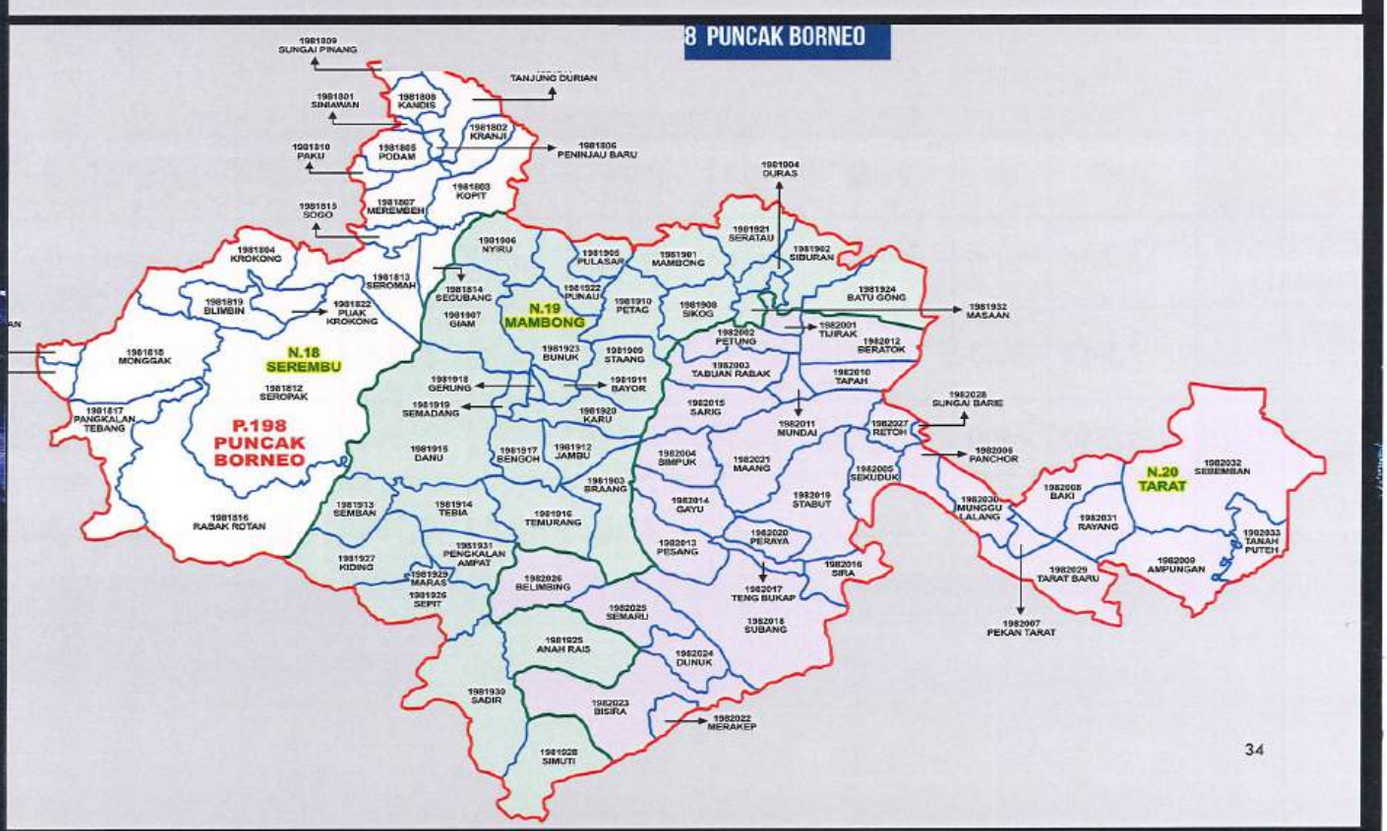

PARLIMEN / DUN ASAL
(JUMLAH PEMILIH / PECAHAN KAUM / PARTI / LUAS KAWASAN)

KAUM / N/P	MELAYU		CINA		IBAN		BIDAYUH		ORANG ULU	
	JUM	%	JUM	%	JUM	%	JUM	%	JUM	%
SEREMBU	867	5.3	3,283	20.0	549	3.4	11,439	69.8	126	0.8
MAMBONG	1,619	4.7	8,253	23.7	3,015	8.7	21,247	61.1	317	0.9
TARAT	1,757	5.6	8,774	28.1	1,619	5.2	18,666	59.8	154	0.5
PUNCAK BORNEO	4,243	5.1	20,310	24.6	5,183	6.3	51,352	62.3	597	0.7

DUN / PARLIMEN	PEMILIH	PARTI	LUAS KAWASAN (KM^2)
SEREMBU	16,381	PBB	311
MAMBONG	34,796	PBB	497
TARAT	31,234	PBB	520
PUNCAK BORNEO	82,411	PBB	1,328

P.198 PUNCAK BORNEO

DUN/PARLIMEN	PEMILIH
MAMBONG	29,682
SUNGAI SERIN	20,169
BUNG SADUNG	18,531
PUNCAK BORNEO	68,382

DUN/PARLIMEN	PARTI
MAMBONG	PBB
SUNGAI SERIN	PBB
BUNG SADUNG	PBB
PUNCAK BORNEO	PBB

KAUM (SELEPAS PERSEMPADANAN)

KAUM / N/P	MELAYU		CINA		IBAN		BIDAYUH		ORANG ULU	
	JUM	%	JUM	%	JUM	%	JUM	%	JUM	%
MAMBONG	1,501	5.1	7,845	26.4	2,738	9.2	17,005	57.3	282	1.0
SUNGAI SERIN	294	1.5	5,980	29.6	919	4.6	12,666	62.8	100	0.5
BUNG SADUNG	1,522	8.2	3,223	17.4	1,177	6.4	12,384	66.8	124	0.7
PUNCAK BORNEO	3,317	4.9	17,048	24.9	4,834	7.1	42,055	61.5	506	0.7

P.206 TANJONG MANIS

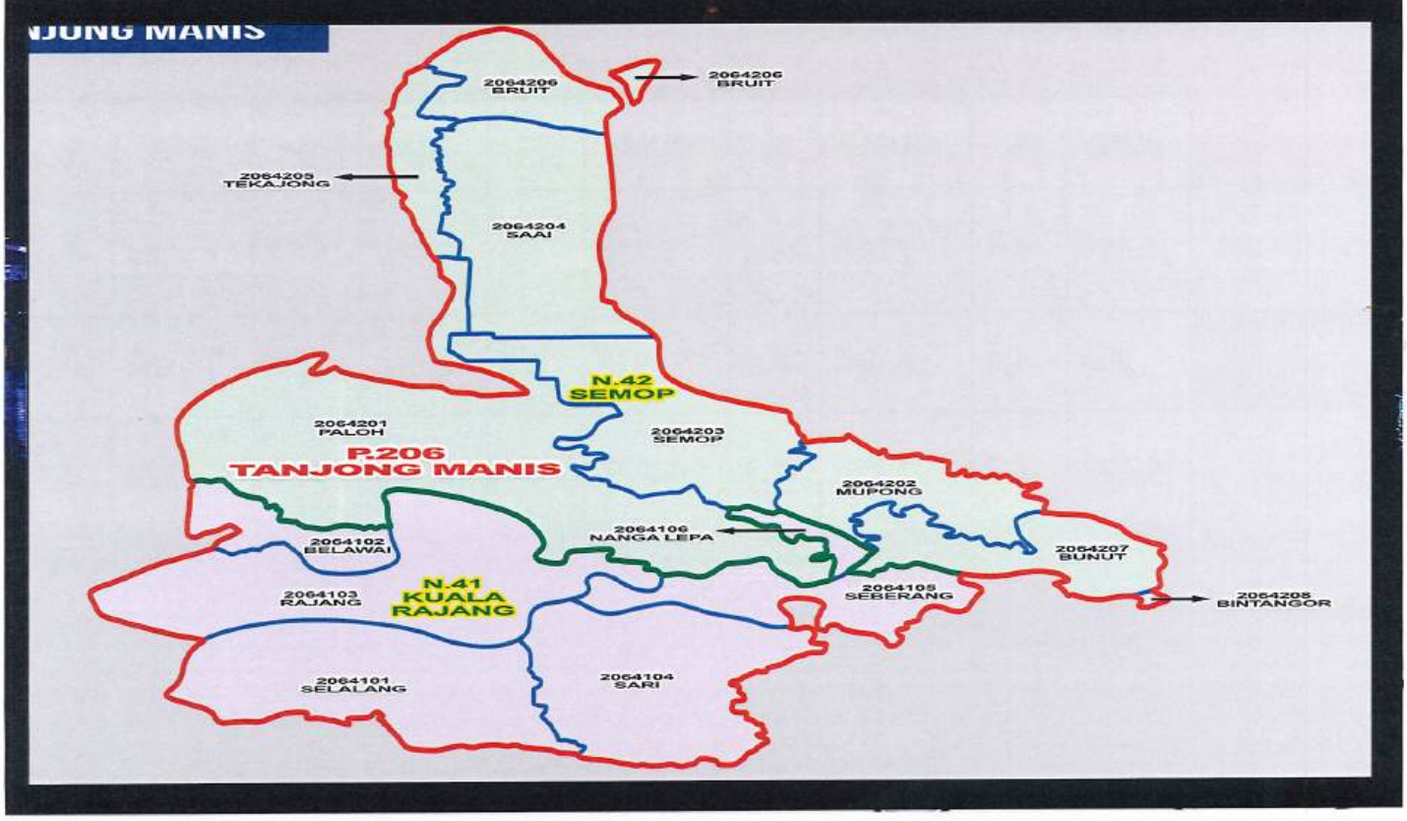

PARLIMEN / DUN ASAL
(JUMLAH PEMILIH / PECAHAN KAUM / PARTI / LUAS KAWASAN)

KAUM / N/P	MELAYU		CINA		IBAN		BIDAYUH		ORANG ULU	
	JUM	%	JUM	%	JUM	%	JUM	%	JUM	%
KUALA RAJANG	11,892	63.0	1,514	8.0	5,040	26.7	81	0.4	155	0.8
SEMOP	11,187	75.0	517	3.5	2,935	19.7	37	0.2	110	0.7
TANJONG MANIS	23,079	68.3	2,031	6.0	7,975	23.6	118	0.3	265	0.8

DUN / PARLIMEN	PEMILIH	PARTI	LUAS KAWASAN (KM^2)
KUALA RAJANG	18,873	PBB	778
SEMOP	14,907	PBB	1,246
TANJONG MANIS	33,780	PBB	2,024

P.206 TANJONG MANIS

DUN / PARLIMEN	PEMILIH
KUALA RAJANG	10,762
SUSUR JAMBU	13,265
MUARA LASSA	11,460
TANJONG MANIS	35,487

DUN / PARLIMEN	PARTI
KUALA RAJANG	PBB
SUSUR JAMBU	PBB
MUARA LASSA	PBB
TANJONG MANIS	PBB

KAUM (SELEPAS PERSEMPADANAN)

KAUM / N/P	MELAYU		CINA		IBAN		BIDAYUH		ORANG ULU	
	JUM	%	JUM	%	JUM	%	JUM	%	JUM	%
KUALA RAJANG	6,326	58.8	403	3.7	3,774	35.1	38	0.4	114	1.1
SUSUR JAMBU	8,470	63.9	1,553	11.7	2,974	22.4	58	0.4	94	0.7
MUARA LASSA	8,833	77.1	148	1.3	2,281	19.9	27	0.2	67	0.6
TANJONG MANIS	23,629	66.6	2,104	5.9	9,029	25.4	123	0.3	275	0.8

P.211 LANANG

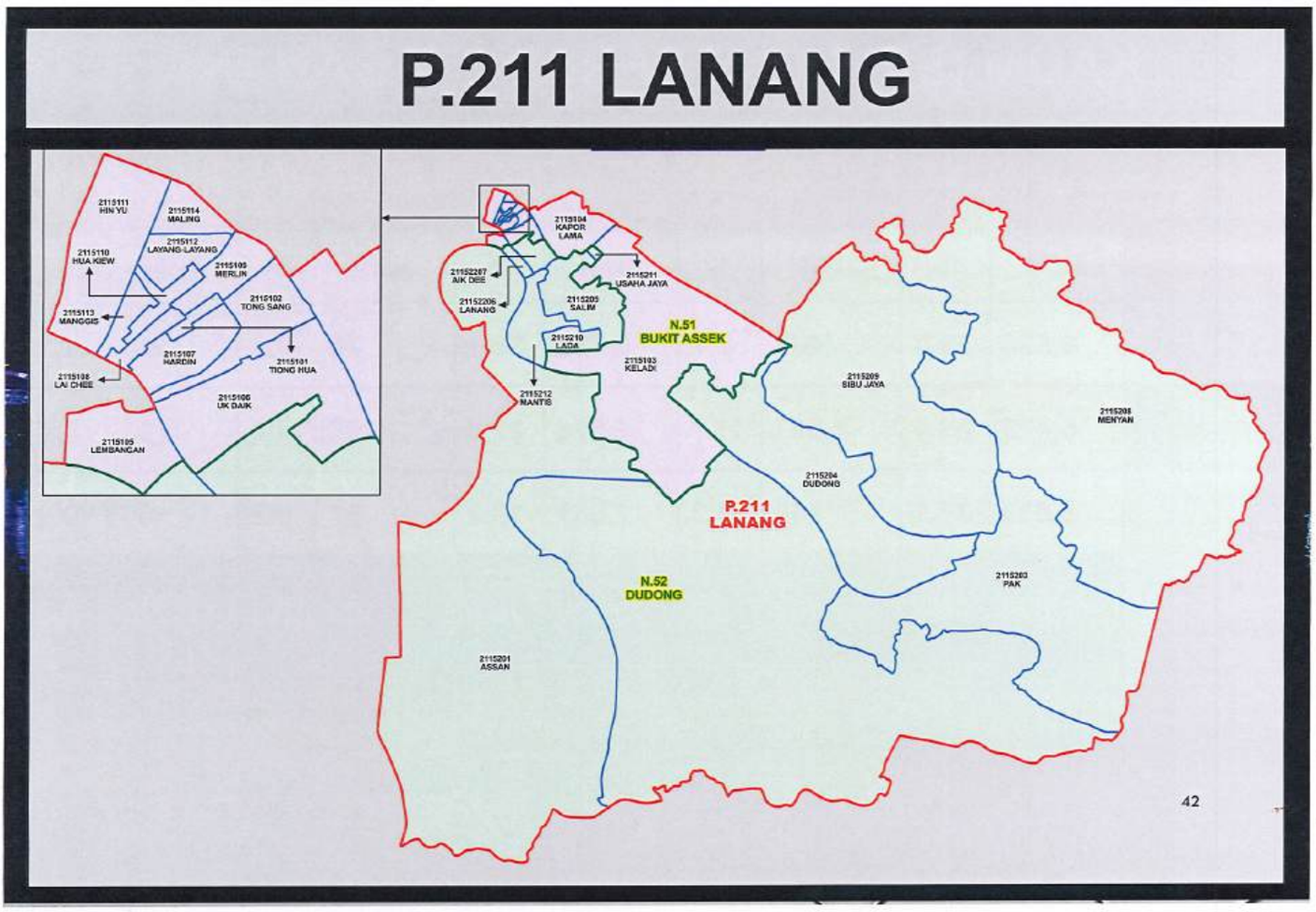
2115111
HIN YU
2115114
MALING
2115112
LAYANG-LAYANG
2115110
HUA KIEW
2115105
MERLIN
2115102
TONG SANG
2115113
MANGGIS
2115107
HARDIN
2115101
TIONG HUA
2115108
LAI CHEE
2115106
UK DAIK
2115109
LEMBANGAN
2115104
KAPOR
LAMA
2115211
USAHA JAYA
2115207
AIK DEE
2115206
LANANG
2115205
SALIM
2115210
LADA
N.51
BUKIT ASSEK
2115103
KELADI
2115212
MANTIS
2115209
SIBU JAYA
2115208
MENYAN
2115204
DUDONG
P.211
LANANG
N.52
DUDONG
2115203
PAK
2115201
ASSAN

PARLIMEN / DUN ASAL
(JUMLAH PEMILIH / PECAHAN KAUM / PARTI / LUAS KAWASAN)

KAUM / N/P	MELAYU		CINA		IBAN		BIDAYUH		ORANG ULU	
	JUM	%	JUM	%	JUM	%	JUM	%	JUM	%
BUKIT ASSEK	2,518	7.2	29,375	83.4	2,975	8.4	73	0.2	111	0.3
DUDONG	5,476	10.0	28,113	51.2	19,651	35.8	480	0.9	636	1.2
LANANG	7,994	17.1	57,488	63.8	22,626	25.1	553	0.6	747	0.8

DUN / PARLIMEN	PEMILIH	PARTI	LUAS KAWASAN (KM^2)
BUKIT ASSEK	35,209	SUPP	53
DUDONG	54,952	PDP	669
LANANG	90,161	SUPP	722

P.211 LANANG

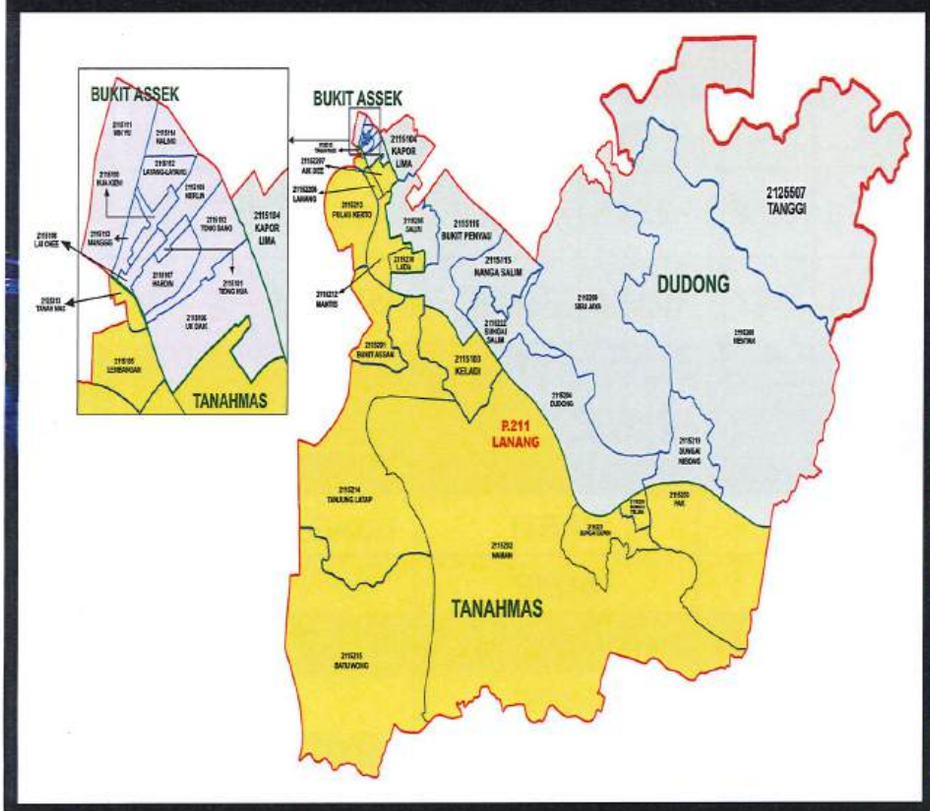

DUN/PARLIMEN	PEMILIH
BUKIT ASSEK	25,291
TANAHMAS	26, 325
DUDONG	34,285
LANANG	85,901

DUN/PARLIMEN	PARTI
BUKIT ASSEK	SUPP
TANAHMAS	SUPP
DUDONG	PDP
LANANG	SUPP

KAUM (SELEPAS PERSEMPADANAN)

KAUM / N/P	MELAYU		CINA		IBAN		BIDAYUH		ORANG ULU	
	JUM	%	JUM	%	JUM	%	JUM	%	JUM	%
BUKIT ASSEK	426	1.7	23,733	93.8	930	3.7	34	0.1	44	0.2
TANAHMAS	1,494	5.7	17,138	65.1	7,292	27.7	105	0.4	188	0.7
DUDONG	3,365	9.8	16,028	46.7	13,519	39.4	377	1.1	493	1.4
LANANG	5,285	6.2	56,899	66.2	21,741	25.3	516	0.6	725	0.8

P.212 SIBU

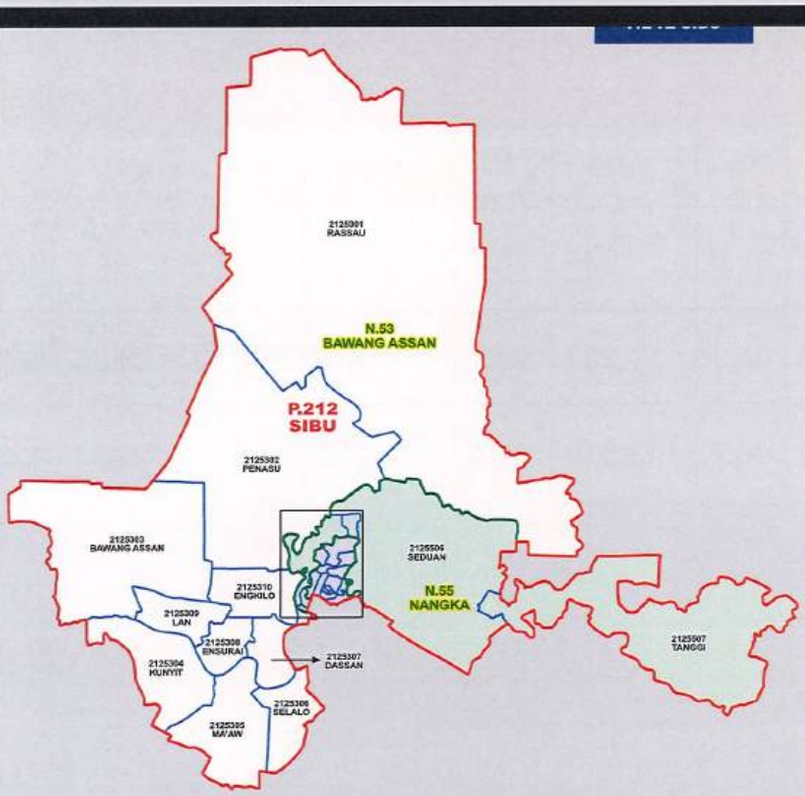
2125301
RASSAU
N.53
BAWANG ASSAN
P.212
SIBU
2125302
PENASU
2125303
BAWANG ASSAN
2125310
ENGKILO
2125309
LAN
2125308
ENSURAI
2125304
KUNYIT
2125305
MATAN
2125306
SELALO
2125307
DASSAN
2125504
SEDUAN
N.55
NANGKA
2125507
TANGGI

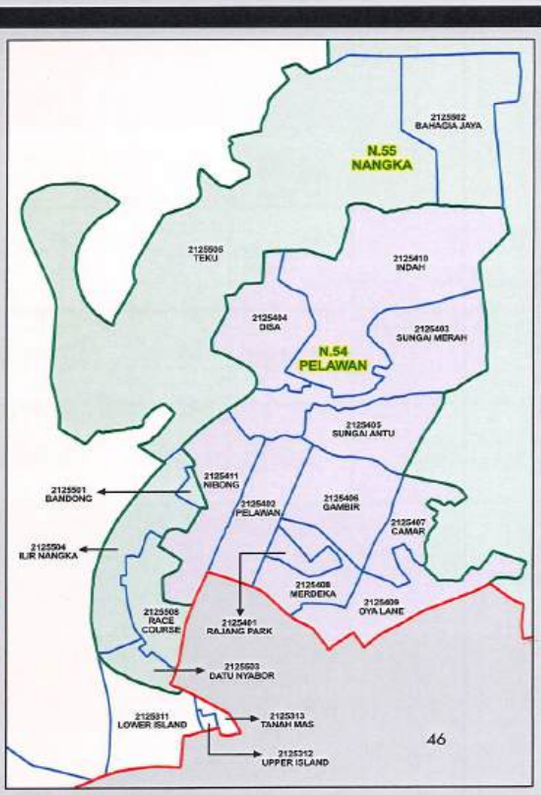
2125502
BAHAGIA JAYA
N.55
NANGKA
2125505
TEKU
2125410
INDAH
2125404
DISA
2125403
SUNGAI MERAH
N.54
PELAWAN
2125405
SUNGAI ANTU
2125411
NIBONG
2125501
BANDONG
2125402
PELAWAN
2125406
GAMBIR
2125407
CAMAR
2125504
IJIR NANGKA
2125408
MERDEKA
2125409
DYA LANE
2125506
RACE COURSE
2125401
RAJANG PARK
2125503
DATU NYABOR
2125311
LOWER ISLAND
2125313
TANAH MAS
2125312
UPPER ISLAND

PARLIMEN / DUN ASAL
(JUMLAH PEMILIH / PECAHAN KAUM / PARTI / LUAS KAWASAN)

KAUM / N/P	MELAYU		CINA		IBAN		BIDAYUH		ORANG ULU	
	JUM	%	JUM	%	JUM	%	JUM	%	JUM	%
BWG ASSAN	1,603	7.1	10,408	45.8	10,212	44.9	134	0.6	229	1.0
PELAWAN	2,336	4.5	46,870	90.9	1,738	3.4	191	0.4	190	0.4
NANGKA	15,646	44.7	9,894	28.3	8,018	22.9	418	1.2	449	1.3
SIBU	19,595	17.9	67,172	61.5	19,968	18.3	743	0.7	868	0.8

DUN / PARLIMEN	PEMILIH	PARTI	LUAS KAWASAN (KM^2)
BAWANG ASSAN	22,725	SUPP	1,074
PELAWAN	51,571	SUPP	12
NANGKA	34,990	PBB	313
SIBU	109,286	SUPP	1,399

P.212 SIBU

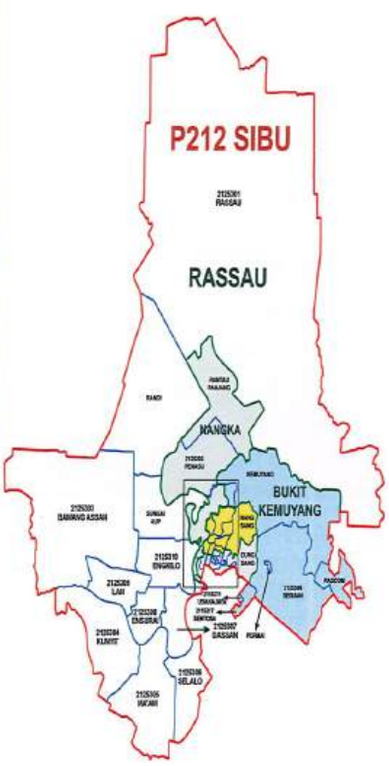

DUN / PARLIMEN	PEMILIH
RASSAU	19,770
SUNGAI MERAH	25,327
PELAWAN	29,547
NANGKA	14,750
BKT KEMUYANG	23,952
SIBU	113,546

DUN / PARLIMEN	PARTI
RASSAU	SUPP
SUNGAI MERAH	SUPP
PELAWAN	SUPP
NANGKA	PBB
BKT KEMUYANG	PBB
SIBU	SUPP

KAUM (SELEPAS PERSEMPADANAN)

KAUM / N/P	MELAYU		CINA		IBAN		BIDAYUH		ORANG ULU	
	JUM	%	JUM	%	JUM	%	JUM	%	JUM	%
RASSAU	1,374	6.9	9,938	50.3	8,065	40.8	110	0.6	171	0.9
SUNGAI MERAH	1,786	7.0	22,128	86.7	1,183	4.6	149	0.6	107	0.4
PELAWAN	863	2.9	27,790	94.1	655	2.2	54	0.2	94	0.3
NANGKA	8,611	58.4	2,769	18.8	2,919	19.8	117	0.8	173	1.2
BKT KEMUYANG	9,660	40.3	5,136	21.4	8,031	33.5	350	1.5	345	1.4
SIBU	22,294	19.6	67,761	59.7	20,853	18.4	780	0.7	890	0.8

P.213 MUKAH

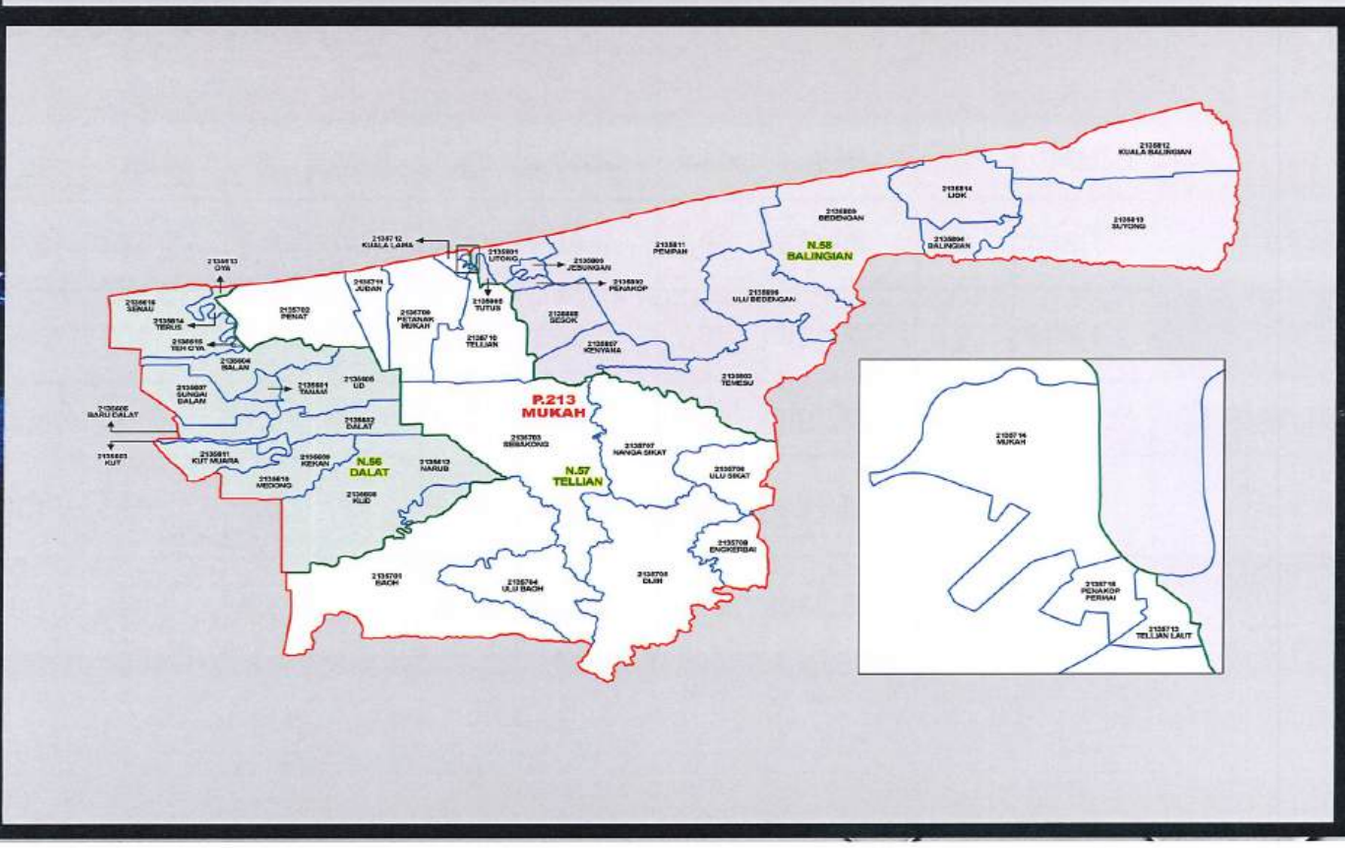
P.213
MUKAH
N.56
DALAT
N.57
TELLIAN
N.58
BALINGIAN
2135712
KUALA LAWA
2135801
LITOANG
2135809
JESUNGAN
2135930
PENAKOP
2135811
PEMPAN
2135812
KUALA BALINGIAN
2135814
LIOK
2135813
SUYONG
2135894
BALINGIAN
2135869
BEDEMGAN
2135895
ULU BEDEMGAN
2135893
TEMESU
2135887
KENYARA
2135888
SESOK
2135710
TELLIAN
2135709
PETANAK
MUKAH
2135711
JUDAN
2135702
PENAT
2135714
TERUS
2135713
GYA
2135616
SENAU
2135606
UD
2135611
TAMAM
2135607
DALAT
2135601
KUT MUARA
2135609
KEKAN
2135610
MEDONG
2135608
KLID
2135613
NARUB
2135703
BAGAS
2135704
ULU BAGH
2135701
BACH
2135705
BINATANG
2135707
NANGA SIKAT
2135706
ULU SIKAT
2135708
ENGKERSAI
2135716
PENAKOP
PERMAI
2135715
TELLIAN LAUT

PARLIMEN / DUN ASAL
(JUMLAH PEMILIH / PECAHAN KAUM / PARTI / LUAS KAWASAN)

KAUM / N/P	MELAYU		CINA		IBAN		BIDAYUH		ORANG ULU	
	JUM	%	JUM	%	JUM	%	JUM	%	JUM	%
DALAT	15,956	87.3	1,513	8.3	489	2.7	44	0.2	130	0.7
TELLIAN	9,035	54.7	2,218	13.4	4,875	29.5	92	0.3	140	0.8
BALINGIAN	8,239	60.8	981	7.2	4,108	30.3	38	0.6	81	0.6
MUKAH	33,230	68.7	4,712	9.7	9,472	19.6	174	0.4	351	0.7

DUN / PARLIMEN	PEMILIH	PARTI	LUAS KAWASAN (KM^2)
DALAT	18,281	PBB	658
TELLIAN	16,511	PBB	1,227
BALINGIAN	13,552	PBB	1,100
MUKAH	48,344	PBB	2,985

P.213 MUKAH

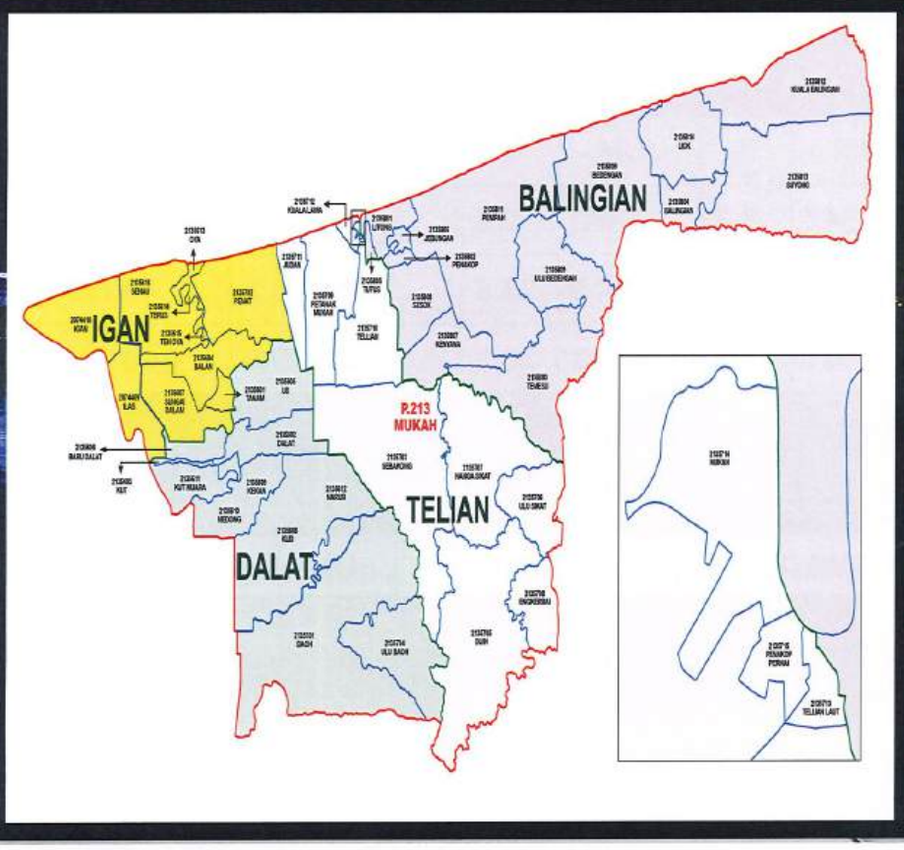

DUN / PARLIMEN	PEMILIH
OYA	10,830
DALAT	12,452
TELLIAN	14,225
BALINGIAN	13,552
MUKAH	51,059

DUN / PARLIMEN	PARTI
OYA	PBB
DALAT	PBB
TELLIAN	PBB
BALINGIAN	PRS
MUKAH	PBB

KAUM (SELEPAS PERSEMPADANAN)

KAUM / N/P	MELAYU		CINA		IBAN		BIDAYUH		ORANG ULU	
	JUM	%	JUM	%	JUM	%	JUM	%	JUM	%
OYA	9,828	90.7	332	3.1	502	4.6	20	0.2	61	0.6
DALAT	9,049	72.7	1,251	10.0	1,913	15.4	33	0.3	103	0.8
TELLIAN	8,452	59.4	2,165	15.2	3,257	22.9	85	0.6	125	0.9
BALINGIAN	8,239	60.8	981	7.2	4,108	30.3	38	0.3	81	0.6
MUKAH	35,568	69.7	4,729	9.3	9,780	19.2	176	0.3	370	0.7

P.214 SELANGAU

PARLIMEN / DUN ASAL
(JUMLAH PEMILIH / PECAHAN KAUM / PARTI / LUAS KAWASAN)

KAUM / N/P	MELAYU		CINA		IBAN		BIDAYUH		ORANG ULU	
	JUM	%	JUM	%	JUM	%	JUM	%	JUM	%
TAMIN	272	1.1	681	2.8	22,703	93.3	115	0.5	360	1.5
KAKUS	1,079	4.6	1,102	4.7	18,790	80.3	136	0.6	2,142	9.2
SELANGAU	1,351	2.8	1,783	3.7	41,493	86.9	251	0.5	2,502	5.2

DUN / PARLIMEN	PEMILIH	PARTI	LUAS KAWASAN (KM^2)
TAMIN	24,334	PRS	3,492
KAKUS	23,397	PRS	5,701
SELANGAU	47,731	PRS	9,193

P.214 SELANGAU

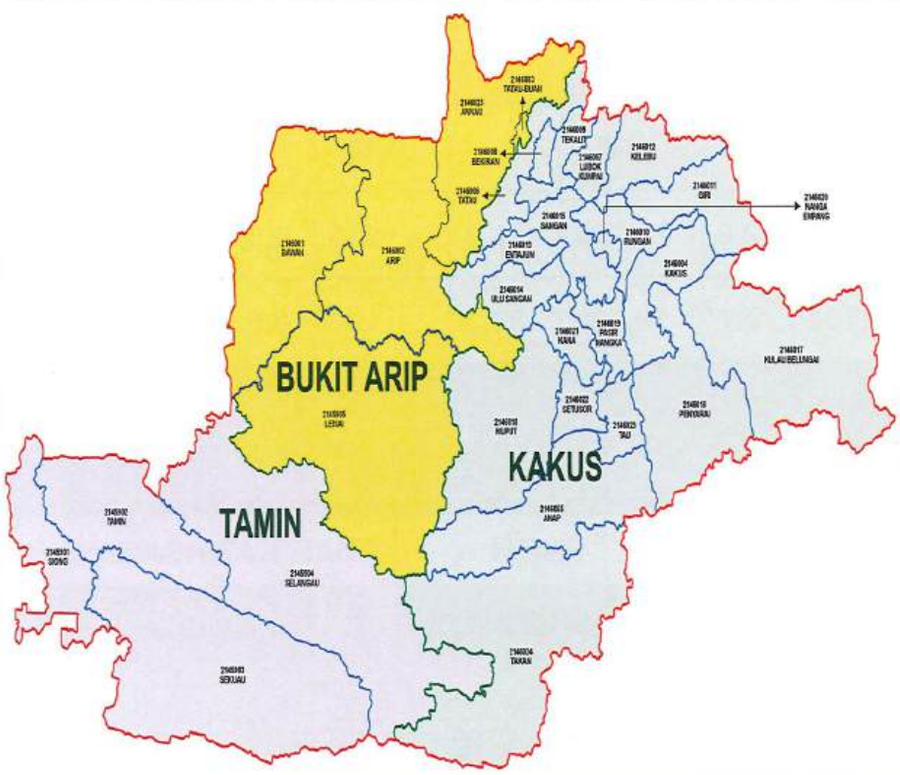

DUN / PARLIMEN	PEMILIH
TAMIN	19,114
BUKIT ARIP	15,272
KAKUS	13,342
SELANGAU	47,728

DUN / PARLIMEN	PARTI
TAMIN	PRS
BUKIT ARIP	PRS
KAKUS	PRS
SELANGAU	PRS

KAUM (SELEPAS PERSEMPADANAN)

KAUM / N/P	MELAYU		CINA		IBAN		BIDAYUH		ORANG ULU	
	JUM	%	JUM	%	JUM	%	JUM	%	JUM	%
TAMIN	238	1.2	565	3.0	17,778	93.0	91	0.5	281	1.5
BUKIT ARIP	881	5.8	453	3.0	13,392	87.7	80	0.5	346	2.3
KAKUS	230	1.7	765	5.7	10,322	77.4	80	0.6	1,875	14.1
SELANGAU	1,349	2.8	1,783	3.7	41,492	86.9	251	0.5	2,502	5.2

P.215 KAPIT

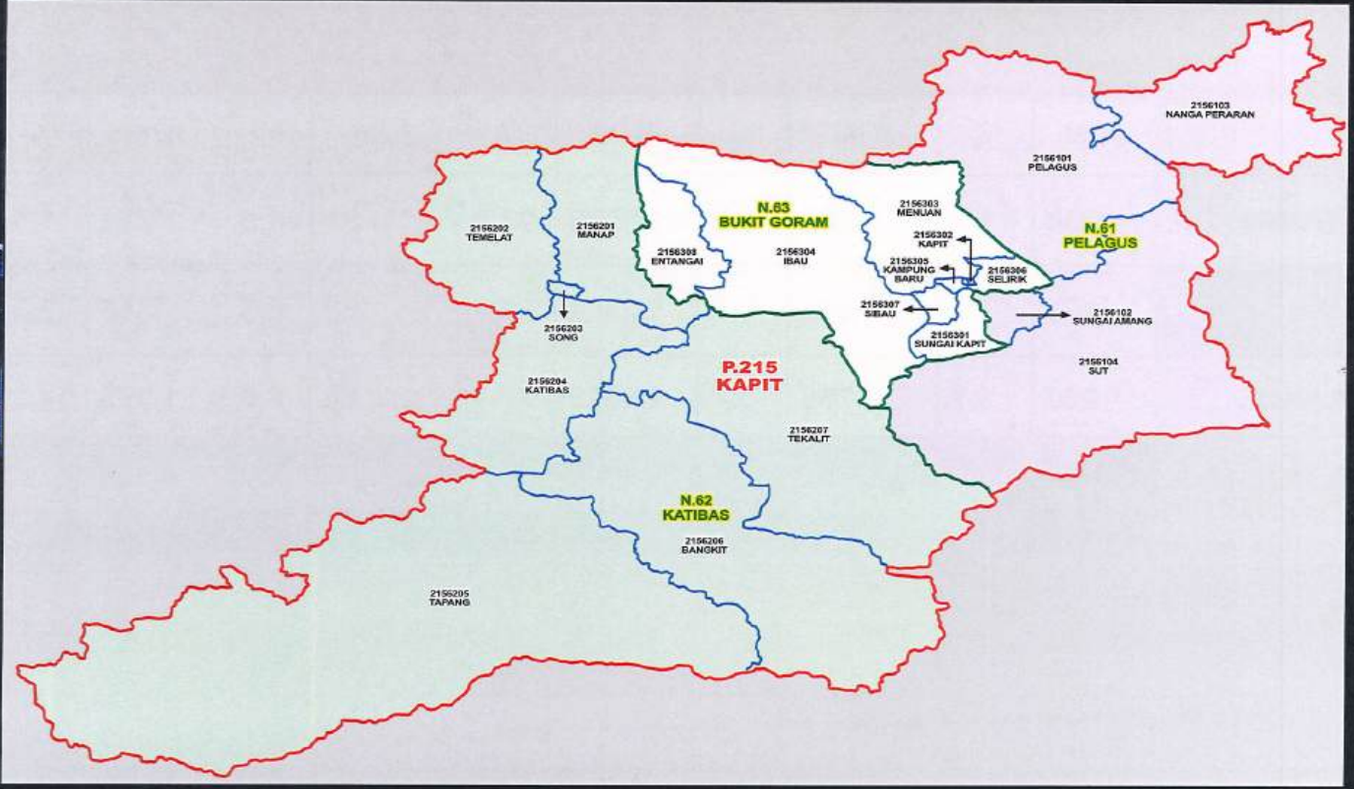
2156103
NANGA PERARAN
2156101
PELAGUS
N.61
PELAGUS
2156102
SUNGAI AMANG
2156104
SUT
2156303
MENUAN
2156302
KAPIT
2156305
KAMPUNG BARU
2156306
SELIRIK
2156307
SIBAU
2156301
SUNGAI KAPIT
N.63
BUKIT GORAM
2156304
IBAU
2156308
ENTANGAI
2156202
TEMELAT
2156201
MANAP
2156203
SONG
2156204
KATIBAS
P.215
KAPIT
2156207
TEKALIT
N.62
KATIBAS
2156206
BANGKIT
2156205
TAPANG

PARLIMEN / DUN ASAL
(JUMLAH PEMILIH / PECAHAN KAUM / PARTI / LUAS KAWASAN)

KAUM / N/P	MELAYU		CINA		IBAN		BIDAYUH		ORANG ULU	
	JUM	%	JUM	%	JUM	%	JUM	%	JUM	%
PELAGUS	106	0.9	89	0.7	11,393	95.4	35	0.3	227	1.9
KATIBAS	470	2.9	779	4.8	14,634	89.8	66	0.4	253	1.6
BUKIT GORAM	966	5.3	3,134	17.0	13,423	73.0	77	0.4	607	3.3
KAPIT	1,542	3.3	4,002	8.6	39,450	84.6	178	0.4	1,087	2.3

DUN / PARLIMEN	PEMILIH	PARTI	LUAS KAWASAN (KM^2)
PELAGUS	11,944	PRS	1,635
KATIBAS	16,300	PBB	3,820
BUKIT GORAM	18,398	PBB	876
KAPIT	46,642	PBB	6,331

P.215 KAPIT

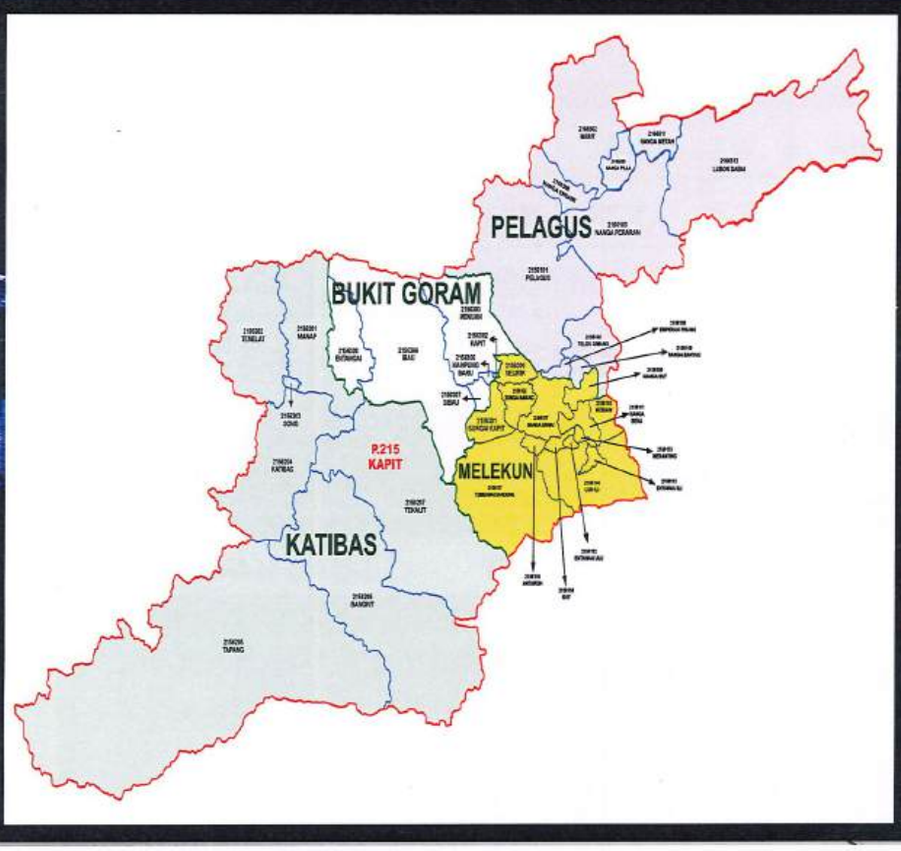

DUN / PARLIMEN	PEMILIH
KATIBAS	16,300
BUKIT GORAM	12,550
MELEKUN	10,629
PELAGUS	10,387
KAPIT	49,866

DUN / PARLIMEN	PARTI
KATIBAS	PBB
BUKIT GORAM	PBB
MELEKUN	PBB
PELAGUS	PRS
KAPIT	PBB

KAUM (SELEPAS PERSEMPADANAN)

KAUM / N/P	MELAYU		CINA		IBAN		BIDAYUH		ORANG ULU	
	JUM	%	JUM	%	JUM	%	JUM	%	JUM	%
KATIBAS	470	2.9	779	4.8	14,634	89.8	66	0.4	253	1.6
BUKIT GORAM	746	5.9	2,487	19.8	8,805	70.2	39	0.3	324	2.6
MELEKUN	256	2.4	674	6.3	9,211	86.7	56	0.5	355	3.3
PELAGUS	92	0.9	104	1.0	9,417	90.7	29	0.3	664	6.4
KAPIT	1,564	3.1	4,044	8.1	42,067	84.4	190	0.4	1,596	3.2

P.218 SIBUTI

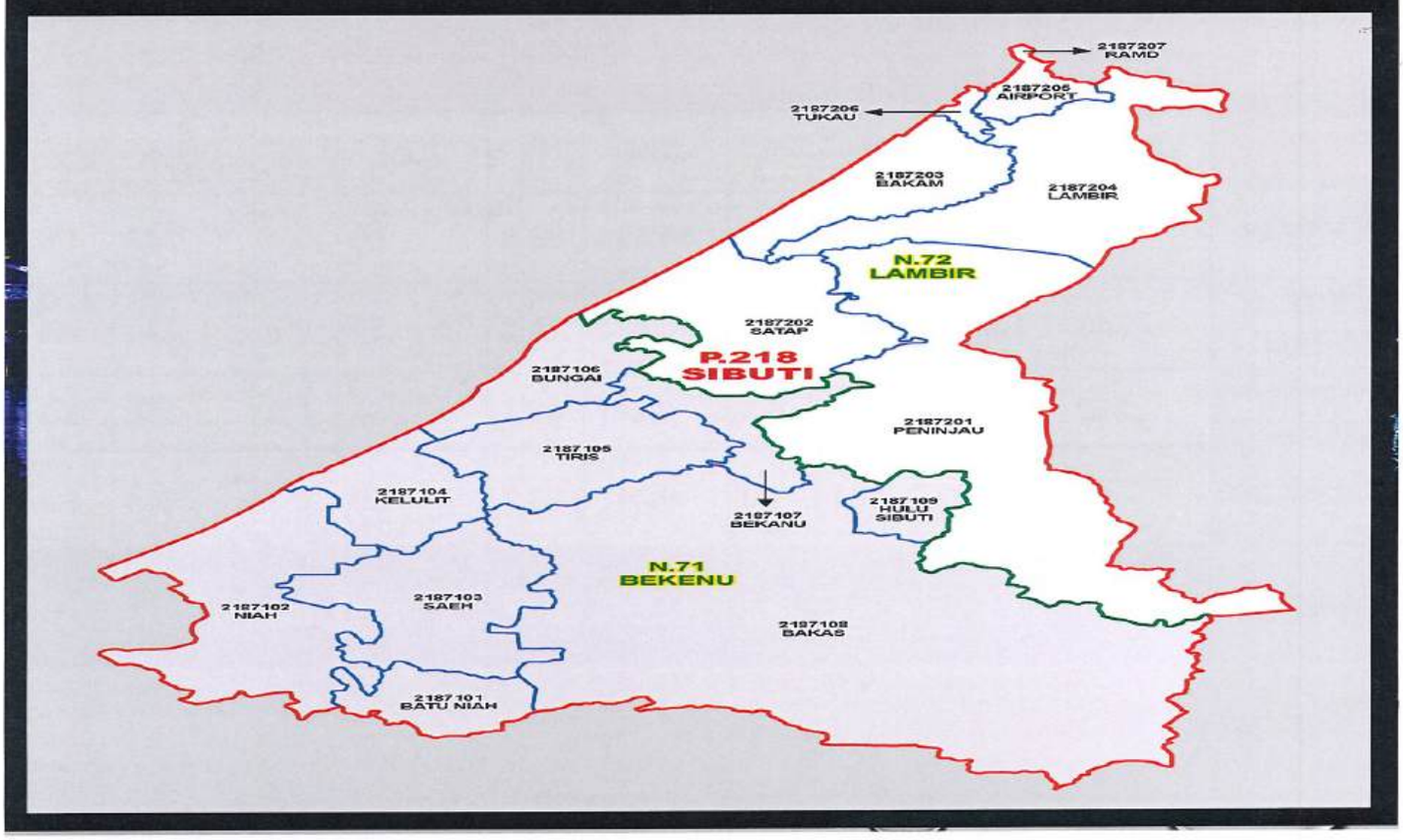
2187207
RAMD
2187205
AIRPORT
2187206
TUKAU
2187203
BAKAM
2187204
LAMBIR
N.72
LAMBIR
2187202
SATAP
P.218
SIBUTI
2187106
BUNGAI
2187201
PENINJAU
2187105
TIRIS
2187104
KELULIT
2187109
HULU
SIBUTI
2187107
BEKANU
N.71
BEKENU
2187103
SAEH
2187102
NIAH
2187108
BAKAS
2187101
BATU NIAH

PARLIMEN / DUN ASAL
(JUMLAH PEMILIH / PECAHAN KAUM / PARTI / LUAS KAWASAN)

KAUM / N/P	MELAYU		CINA		IBAN		BIDAYUH		ORANG ULU	
	JUM	%	JUM	%	JUM	%	JUM	%	JUM	%
BEKENU	8,888	43.4	2,391	11.7	7,662	37.4	286	1.4	729	3.6
LAMBIR	10,034	25.3	11,142	28.1	12,445	31.4	795	2.0	4,609	11.6
SIBUTI	18,922	31.5	13,533	22.5	20,107	33.5	1,081	1.8	5,338	8.9

DUN / PARLIMEN	PEMILIH	PARTI	LUAS KAWASAN (KM^2)
BEKENU	20,476	PBB	1,103
LAMBIR	39,617	PBB	473
SIBUTI	60,093	PBB	1,576

P.218 SIBUTI

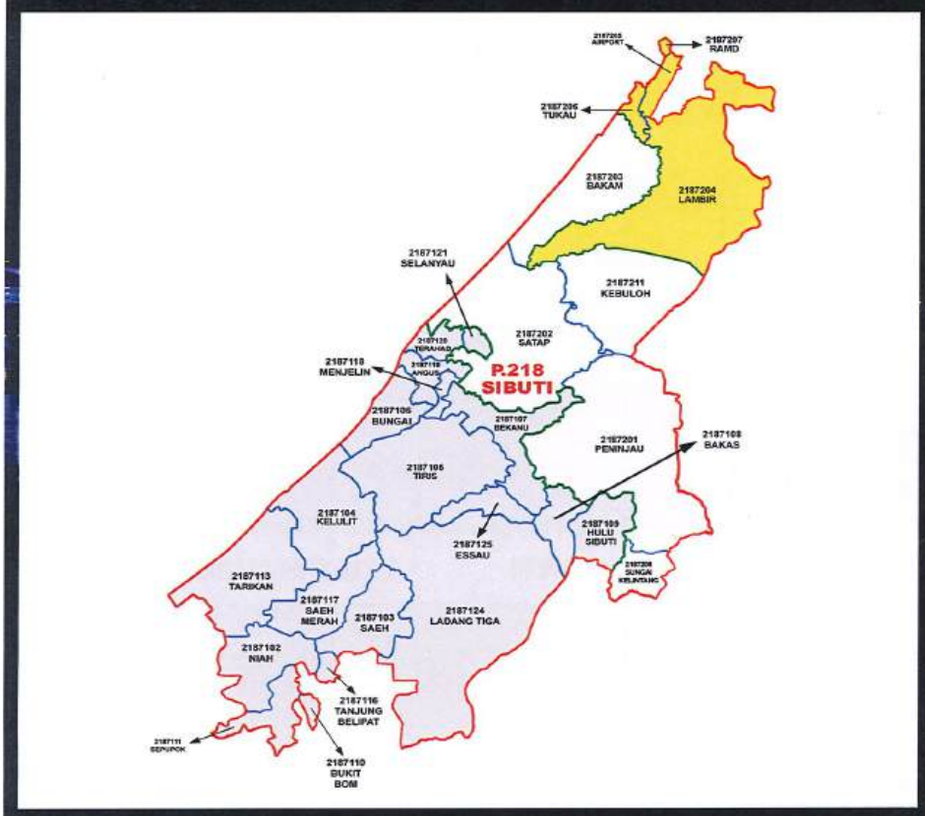

DUN / PARLIMEN	PEMILIH
BEKENU	15,396
PANTAI TUSAN	11,260
TUKAU	13,050
SIBUTI	39,706

DUN / PARLIMEN	PARTI
BEKENU	PBB
PANTAI TUSAN	PBB
TUKAU	PRS
SIBUTI	PBB

KAUM (SELEPAS PERSEMPADANAN)

KAUM / N/P	MELAYU		CINA		IBAN		BIDAYUH		ORANG ULU	
	JUM	%	JUM	%	JUM	%	JUM	%	JUM	%
BEKENU	7,882	51.2	1,123	7.3	5,227	34.0	207	1.3	543	3.5
PANTAI TUSAN	5,762	51.2	1,596	14.2	3,317	29.5	163	1.4	235	2.1
TUKAU	2,974	22.8	5,546	42.5	3,163	24.2	160	1.2	1,005	7.7
	BUMIPUTERA (MELAYU/MELANAU/IBAN/BIDAYUH/O.ULU)								7,302	56.0
SIBUTI	16,618	41.9	8,265	20.8	11,707	29.5	530	1.3	1,783	4.5

P.219 MIRI

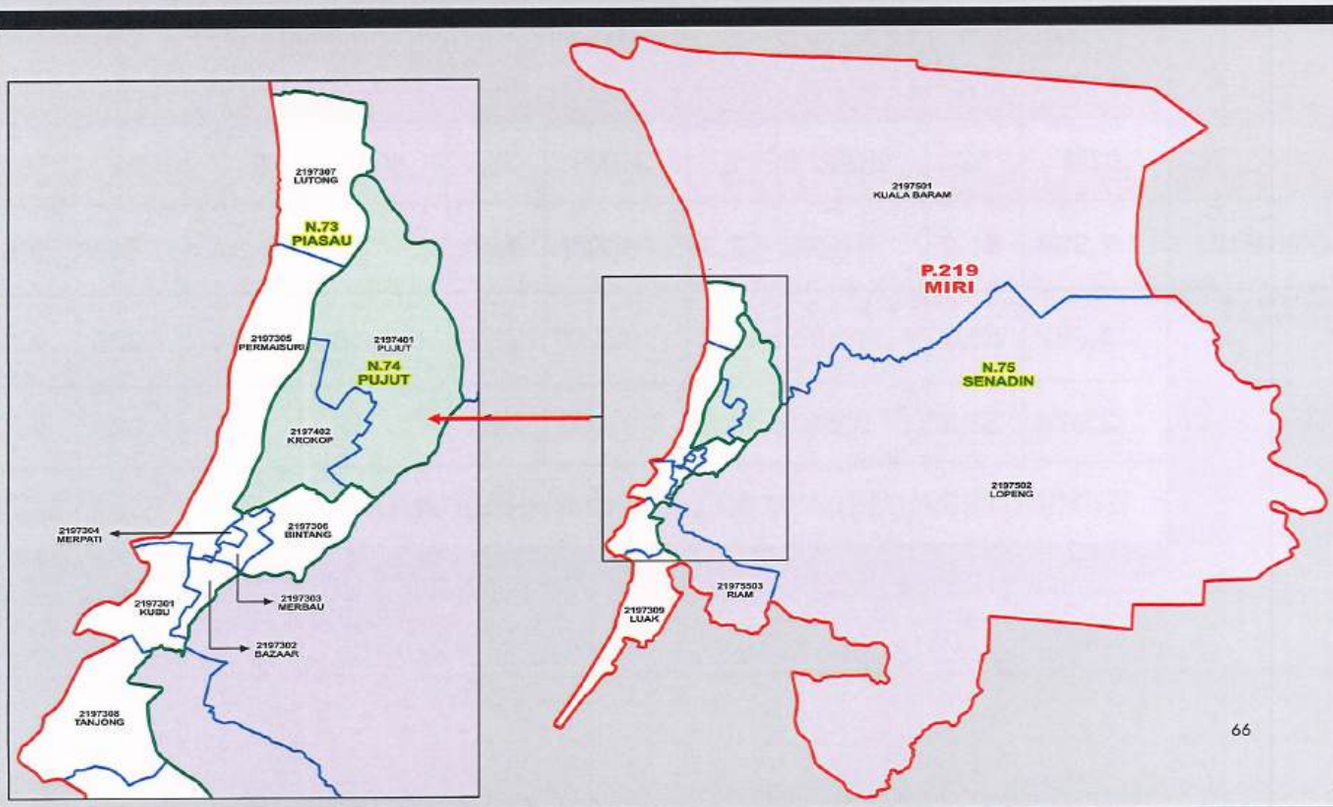
2197307
LUTONG
N.73
PIASAU
2197305
PERMAISURI
2197401
PUJUT
N.74
PUJUT
2197402
KROKOP
2197306
BINTANG
2197304
MERPATI
2197301
KUBU
2197303
MERSAU
2197302
BAZAAR
2197308
TANJONG
2197501
KUALA BARAM
P.219
MIRI
N.75
SENADIN
2197502
LOPENG
2197503
RIAM
2197309
LUAK

PARLIMEN / DUN ASAL
(JUMLAH PEMILIH / PECAHAN KAUM / PARTI / LUAS KAWASAN)

KAUM / N/P	MELAYU		CINA		IBAN		BIDAYUH		ORANG ULU	
	JUM	%	JUM	%	JUM	%	JUM	%	JUM	%
PIASAU	7,368	23.5	16,693	53.3	4,757	15.2	401	1.3	1,336	4.3
PUJUT	10,636	23.8	26,602	59.6	4,146	9.3	522	1.2	1,933	4.3
SENADIN	15,557	21.4	24,337	33.4	23,329	32.0	1,510	2.1	6,957	9.6
MIRI	33,561	22.6	67,632	45.5	32,232	21.7	2,433	1.6	10,226	6.9

DUN / PARLIMEN	PEMILIH	PARTI	LUAS KAWASAN (KM^2)
PIASAU	31,296	SUPP	51
PUJUT	44,624	SUPP	17
SENADIN	72,847	SUPP	703
MIRI	148,765	SUPP	771

P.219 MIRI

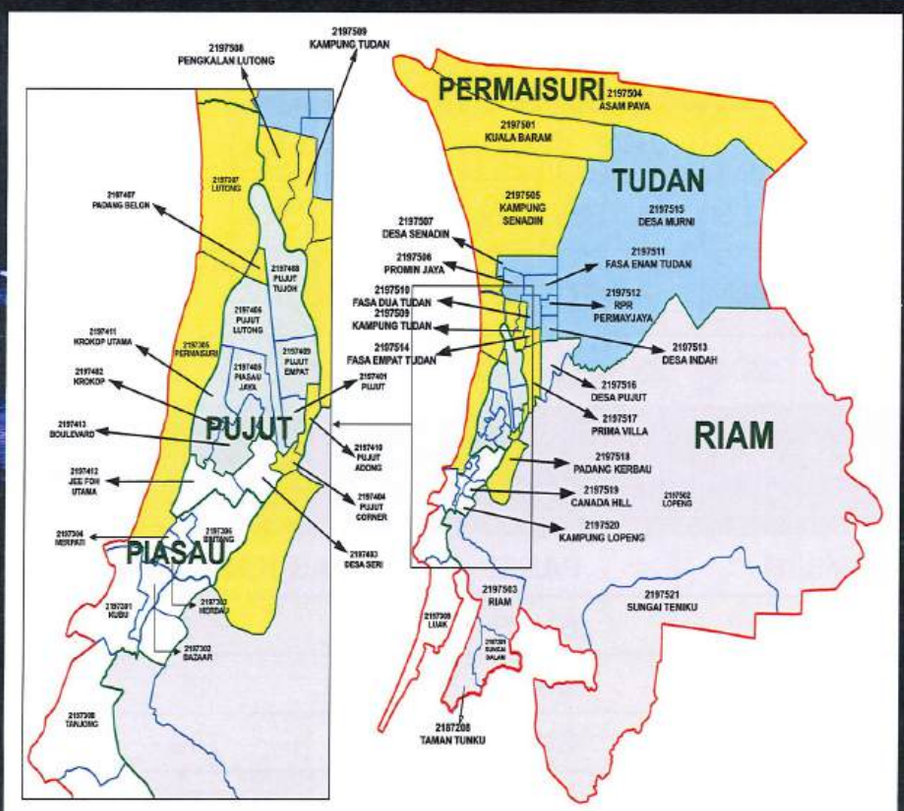

DUN / PARLIMEN	PEMILIH
PIASAU	27,591
PUJUT	31,229
PERMAISURI	32,951
TUDAN	40,099
RIAM	32,857
MIRI	164,727

DUN / PARLIMEN	PARTI
PIASAU	SUPP
PUJUT	SUPP
PERMAISURI	PBB
TUDAN	PBB
RIAM	SUPP
MIRI	SUPP

KAUM (SELEPAS PERSEMPADANAN)

KAUM / N/P	MELAYU		CINA		IBAN		BIDAYUH		ORANG ULU	
	JUM	%	JUM	%	JUM	%	JUM	%	JUM	%
PIASAU	6,197	22.5	17,408	63.1	1,982	7.2	336	1.2	1,063	3.9
PUJUT	6,142	19.7	20,470	65.5	2,463	7.9	357	1.1	1,219	3.9
PERMAISURI	12,778	38.8	8,911	27.0	7,918	24.0	520	1.6	2,195	6.7
TUDAN	6,759	16.9	10,037	25.0	17,271	43.1	956	2.4	4,552	11.4
RIAM	4,334	13.2	14,803	45.1	7,844	23.9	747	2.3	4,571	13.9
MIRI	36,210	22.0	71,629	43.5	37,478	22.8	2,916	1.8	2,894	1.8

P.220 BARAM

2207602
PENGALAYAN
2207603
MARUDI
2207601
NABOR
2207801
LUBOK ANTU
2207802
PUYUT
N.76
MARUDI
2207604
BELURU
2207804
TUTOH
2207606
LONG
TERU
2207605
TERUKING
2207705
LONG LAMA
2207807
PA'LUNGAN
2207808
DANO
2207806
BARIO
2207706
APOH
2207607
JEGAN
P.220
BARAM
2207810
LELLANG
2207701
LONG MIRI
2207703
AKAHPATAH
2207809
REMUDU
N.77
TELANG USAN
N.78
MULU
2207805
LONG
PELUAN
2207702
PANA
2207704
SAN
2207803
LIOMATU

PARLIMEN / DUN ASAL
(JUMLAH PEMILIH / PECAHAN KAUM / PARTI / LUAS KAWASAN)

KAUM / N/P	MELAYU		CINA		IBAN		BIDAYUH		ORANG ULU	
	JUM	%	JUM	%	JUM	%	JUM	%	JUM	%
MARUDI	2,772	10.6	3,410	13.1	15,194	58.2	148	0.6	4,261	16.3
TELANG USAN	104	0.6	569	3.0	614	3.3	62	0.3	17,000	91.1
MULU	164	1.0	446	2.0	4,493	27.2	76	0.5	11,049	66.9
BARAM	3,040	5.0	4,425	7.2	20,301	33.1	286	0.5	32,310	52.7

DUN / PARLIMEN	PEMILIH	PARTI	LUAS KAWASAN KM^2)
MARUDI	26,088	PDP	3,538
TELANG USAN	18,661	PBB	9,062
MULU	16,510	PBB	9,475
BARAM	61,259	PDP	22,075

P.220 BARAM

DUN / PARLIMEN	PEMILIH
MARUDI	23,259
USUN APAU	13,891
TELANG USAN	13,638
MULU	11,282
BARAM	62,070

DUN / PARLIMEN	PARTI
MARUDI	PDP
USUN APAU	PDP
TELANG USAN	PBB
MULU	PBB
BARAM	PDP

KAUM (SELEPAS PERSEMPADANAN)

KAUM / N/P	MELAYU		CINA		IBAN		BIDAYUH		ORANG ULU	
	JUM	%	JUM	%	JUM	%	JUM	%	JUM	%
MARUDI	2,726	11.7	3,323	14.3	14,420	62.0	136	0.6	2,404	10.3
USUN APAU	85	0.6	178	1.3	1,783	12.8	43	0.3	11,502	82.8
TELANG USAN	86	0.6	508	3.7	430	3.2	44	0.3	12,396	90.9
MULU	146	1.3	427	3.8	4,443	39.4	67	0.6	6,021	53.4
BARAM	3,043	4.9	4,436	7.1	21,076	34.0	290	0.5	32,323	52.1

4
PARLIMEN TERLIBAT
DENGAN PINDAAN
SEMPADAN

P.199 SERIAN

ASAL

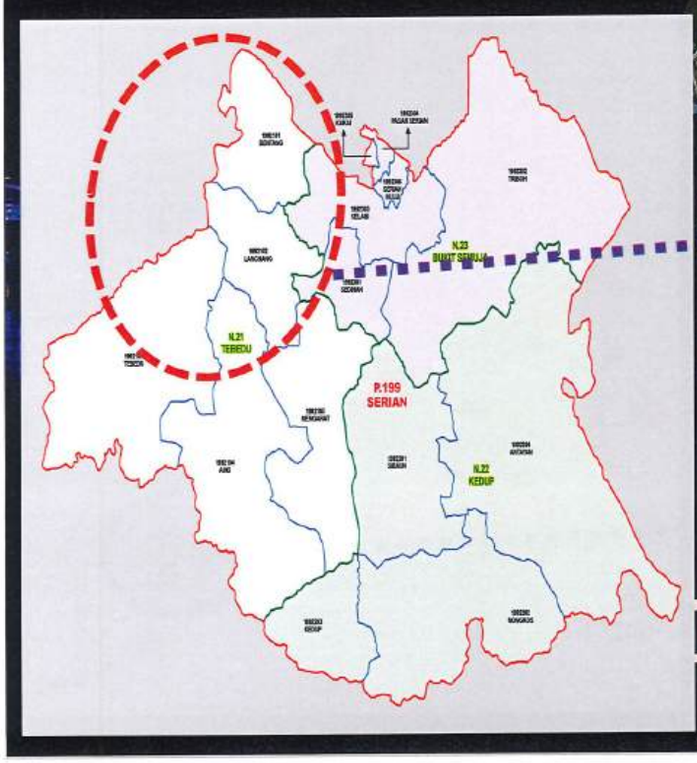

BAHARU

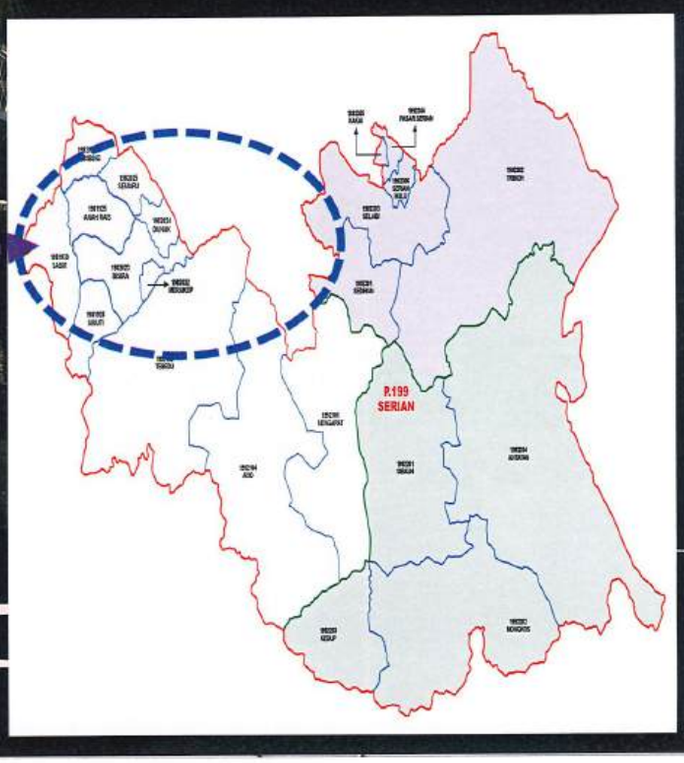

P.201 BATANG LUPAR

ASAL

BAHARU

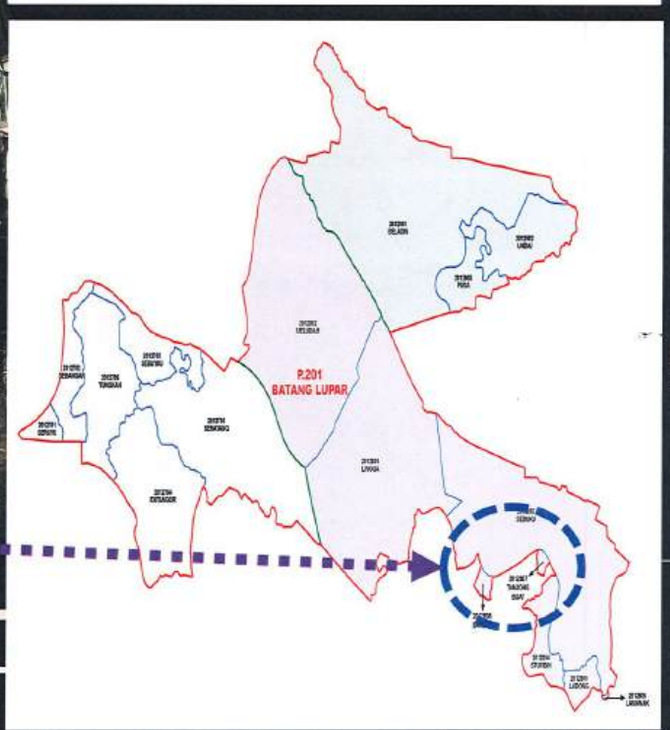

P.202 SRI AMAN

ASAL

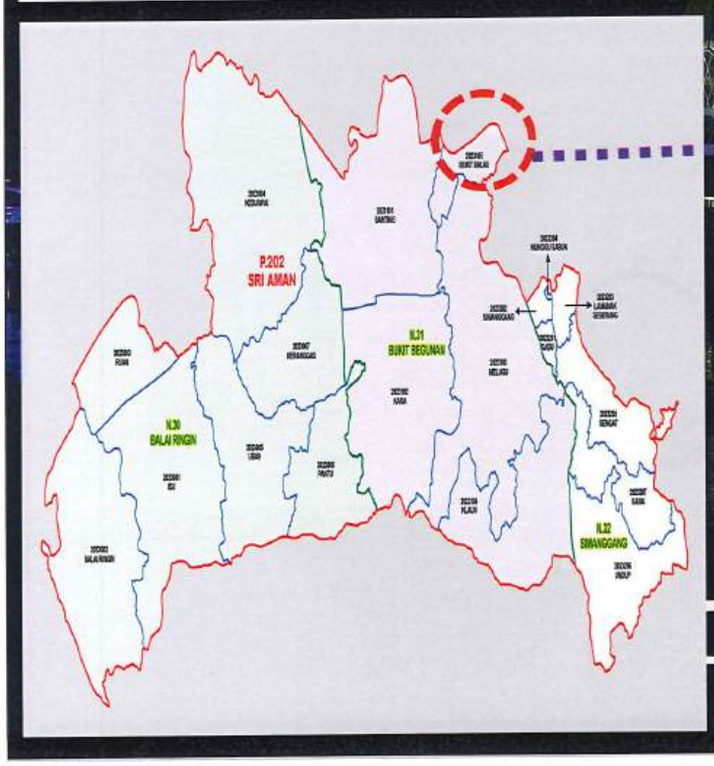

BAHARU

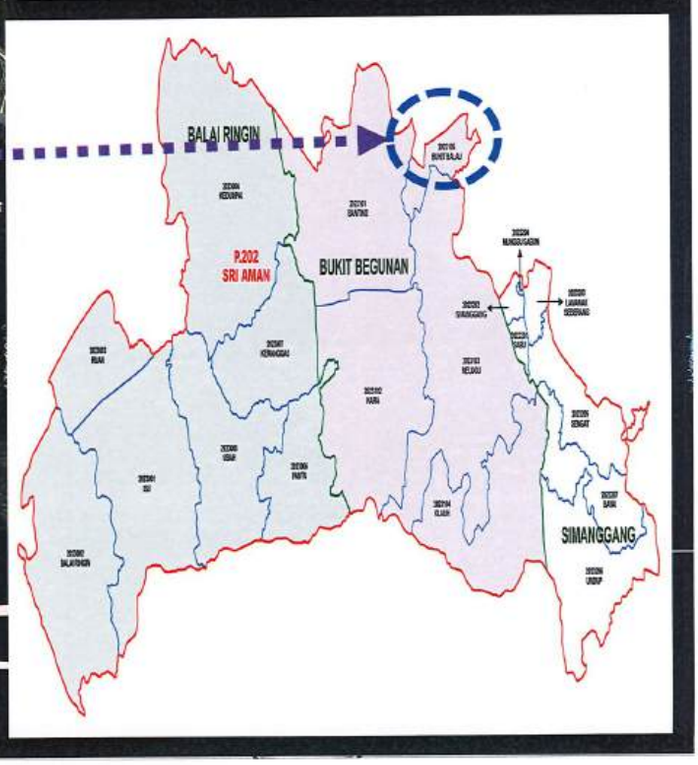

P.203 LUBOK ANTU

ASAL

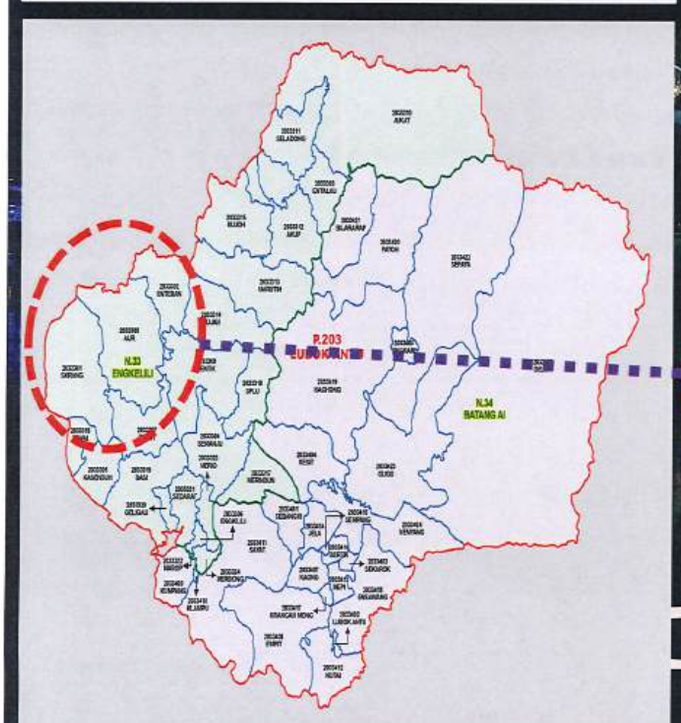

BAHARU

P.204 BETONG

ASAL

BAHARU

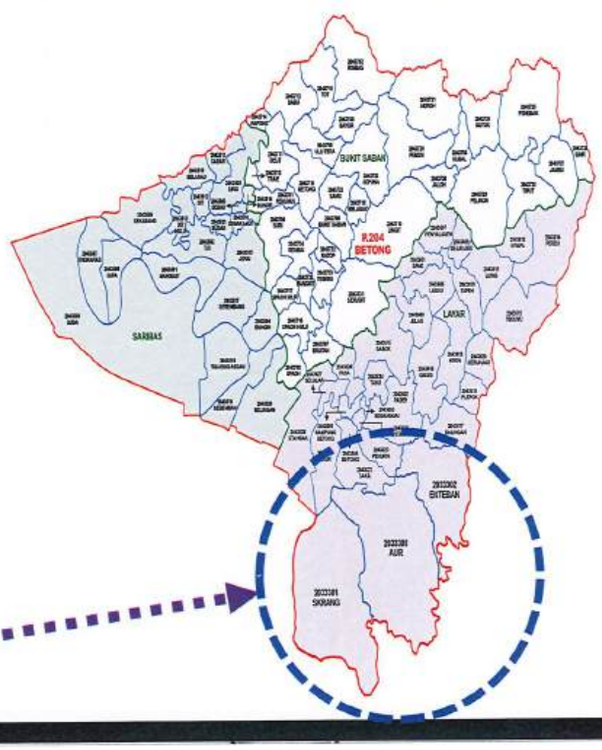

P.207 IGAN

ASAL

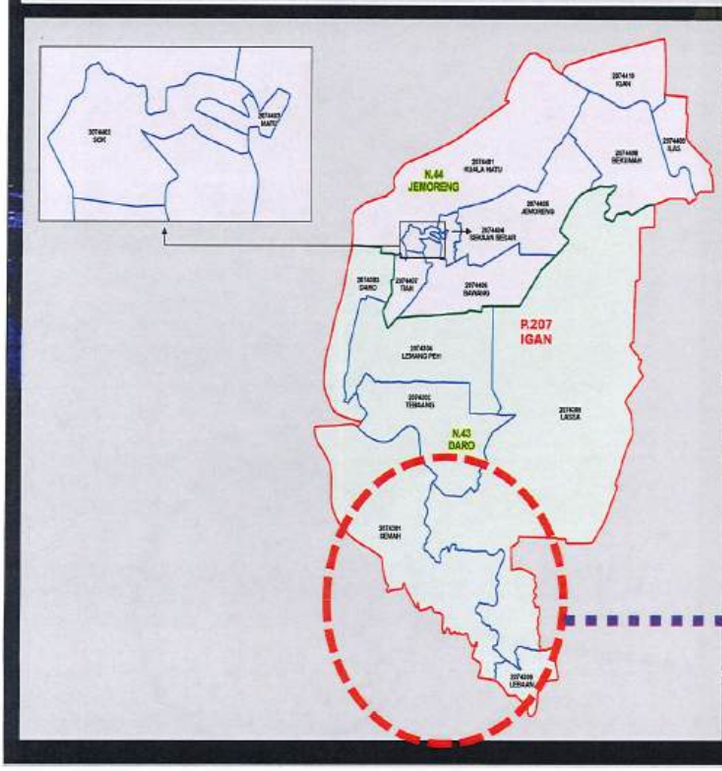

BAHARU

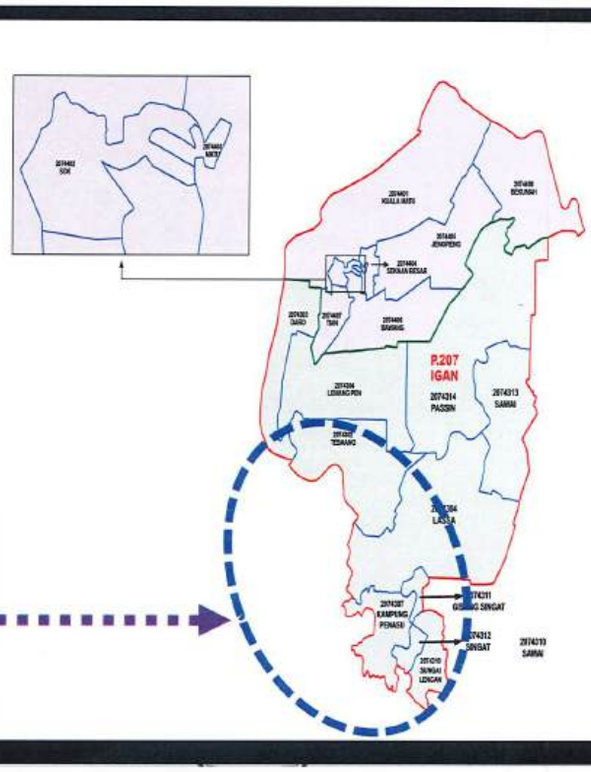

P.208 SARIKEI

ASAL

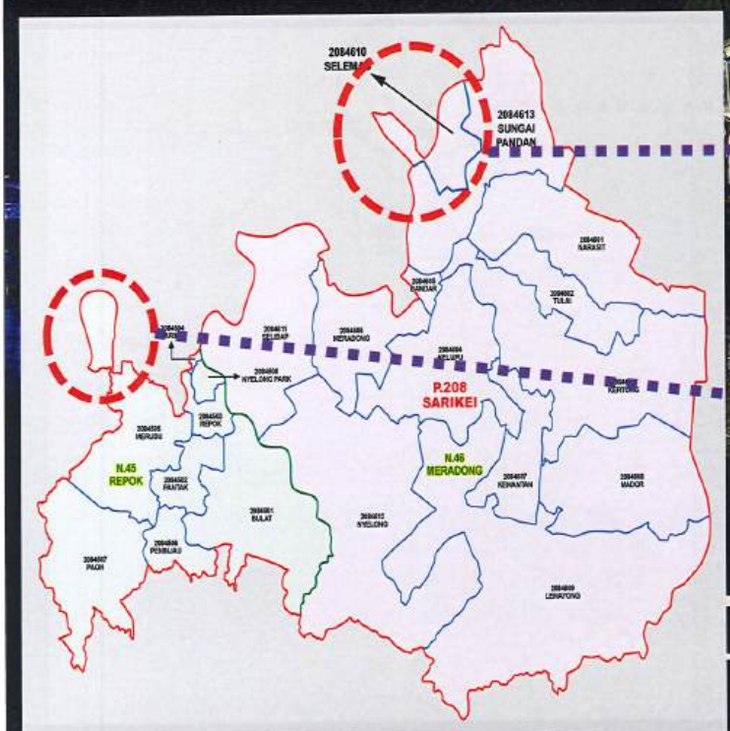

BAHARU

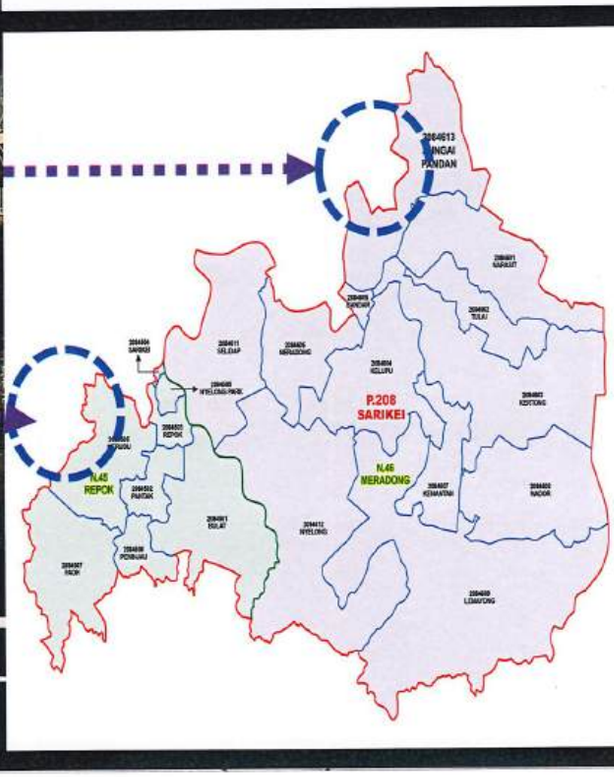

P.216 HULU RAJANG

ASAL

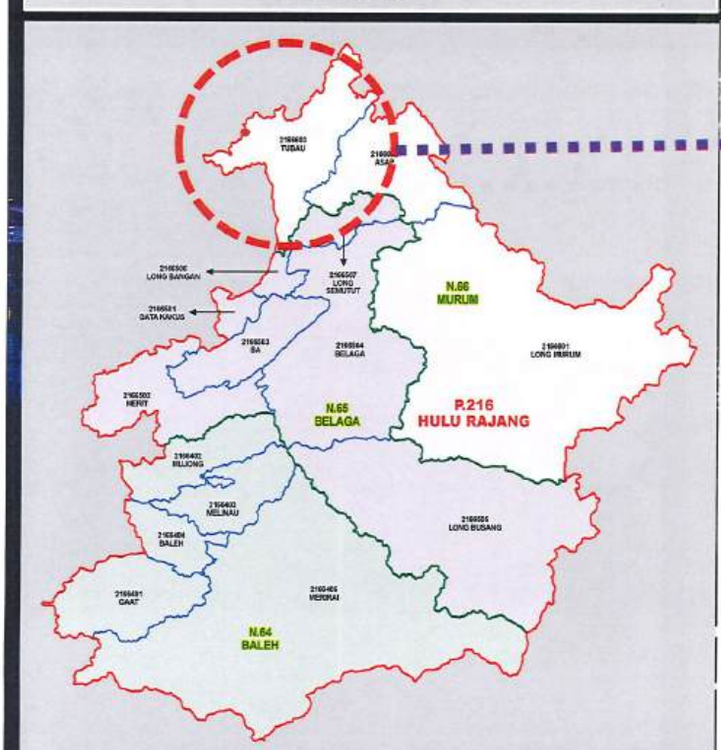

BAHARU

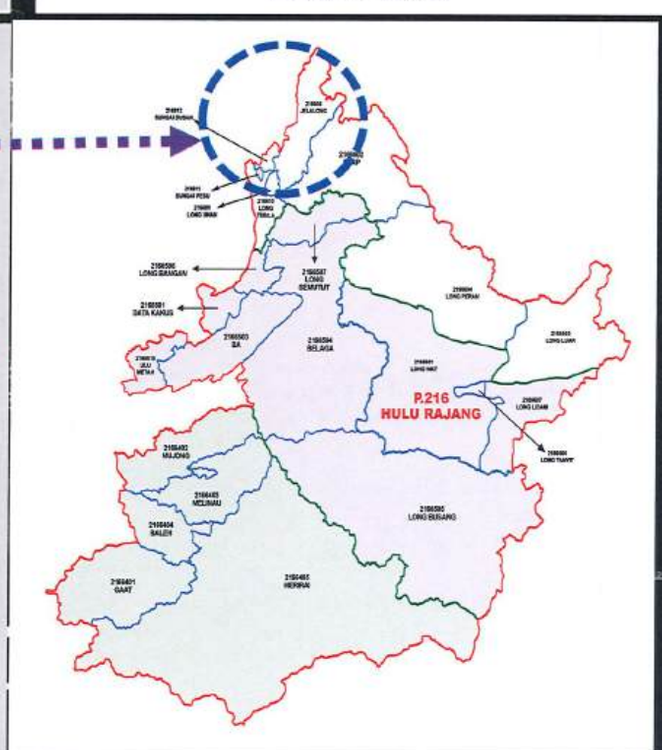

P.217 BINTULU

ASAL

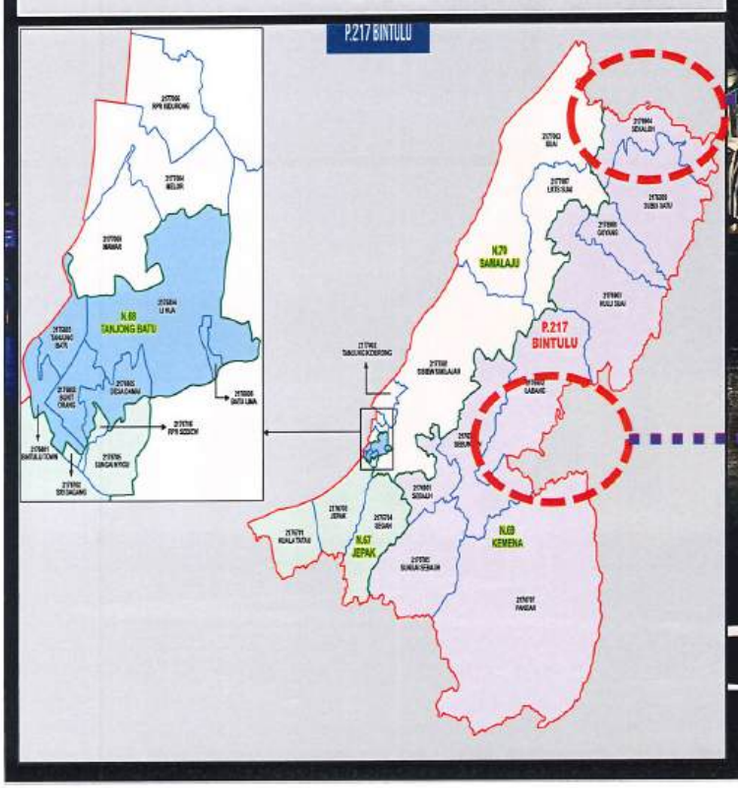

BAHARU

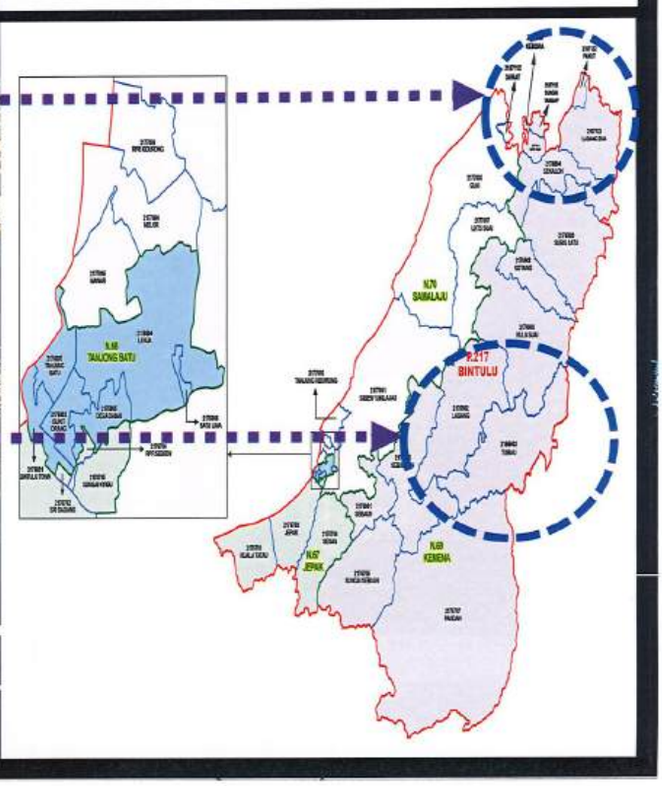


5
RUMUSAN

17 DUN BAHARU
MENGIKUT
KAUM

KAUM	JUMLAH DUN BARU
MELAYU/ MELANAU/ KEDAYAN	7
DAYAK	7
CINA	3

KAUM	JUMLAH DUN BARU
MELAYU	5
MELANAU	2
KEDAYAN	0

KAUM	JUMLAH DUN BARU
IBAN	4
BIDAYUH	2
ORANG ULU	1

SENARAI 17 DUN BAHARU MENGIKUT KAUM

A	MELAYU / MELANAU / KEDAYAN
1	SEJINJANG
2	SERAPI
3	SEMARAK
4	SUSUR JAMBU
5	BUKIT KEMUYANG
6	OYA
7	PERMAISURI

B	CINA
1	SELEDAH
2	TANAHMAS
3	SUNGAI MERAH

C	IBAN
1	BUKIT ARIP
2	MELEKUN
3	TUKAU
4	TUDAN

D	BIDAYUH
1	JAGOI
2	SUNGAI SERIN

E	ORANG ULU
1	USUN APAU

17 DUN BAHARU
MENGIKUT
KOMPONEN GPS

GPS	JUMLAH DUN BARU
PBB	10
SUPP	3
PRS	3
PDP	1

SAYAP PBB	JUMLAH DUN BARU
BUMIPUTERA	7
PESAKA	3

PECAHAN 17 DUN BAHARU MENGIKUT KOMPONEN GPS

A	PBB (BUMIPUTERA)
1	SEJINJANG
2	SERAPI
3	SEMARAK
4	SUSUR JAMBU
5	BUKIT KEMUYANG
6	OYA
7	PERMAISURI
B	PBB (PESAKA)
1	SUNGAI SERIN
2	MELEKUN
3	USUN APAU
C	SUPP
1	SELEDAH
2	TANAHMAS
3	SUNGAI MERAH
D	PRS
1	BUKIT ARIP
2	TUKAU
3	TUDAN
E	PDP
1	JAGOI

JUMLAH DUN
(82 & 99)
MENGIKUT KAUM

JUMLAH DUN MENGIKUT KAUM
(SEDIA ADA 82 DUN)

KAUM		
MELAYU / MELANAU / KEDAYAN	DAYAK	CINA
31	35	16

KAUM		
MELAYU	MELANAU	KEDAYAN
21	8	2

KAUM		
IBAN	BIDAYUH	ORANG ULU
21	8	6

JUMLAH DUN MENGIKUT KAUM
(BAHARU 99 DUN)

KAUM		
MELAYU / MELANAU / KEDAYAN	DAYAK	CINA
37	43	19

KAUM		
MELAYU	MELANAU	KEDAYAN
26	10	2

KAUM		
IBAN	BIDAYUH	ORANG ULU
25	10	7

JUMLAH DUN
(82 & 99)
MENGIKUT
KOMPONEN GPS

JUMLAH DUN MENGIKUT KOMPONEN GPS (SEDIA ADA 82 DUN)

GPS	JUMLAH DUN
PBB	47
SUPP	18
PRS	11
PDP	6

SAYAP PBB	JUMLAH DUN
BUMIPUTERA	31
PESAKA	16
PBB	47

JUMLAH DUN MENGIKUT KOMPONEN GPS (BAHARU 99 DUN)

GPS	JUMLAH DUN
PBB	57
SUPP	21
PRS	14
PDP	7

SAYAP PBB	JUMLAH DUN
BUMIPUTERA	38
PESAKA	19
PBB	57

TERIMA
KASIH